USDA Forest Service
U.S. DEPARTMENT OF AGRICULTURE

Bat Conservation Strategy Roost Overview

USFS Regions 8 and 9

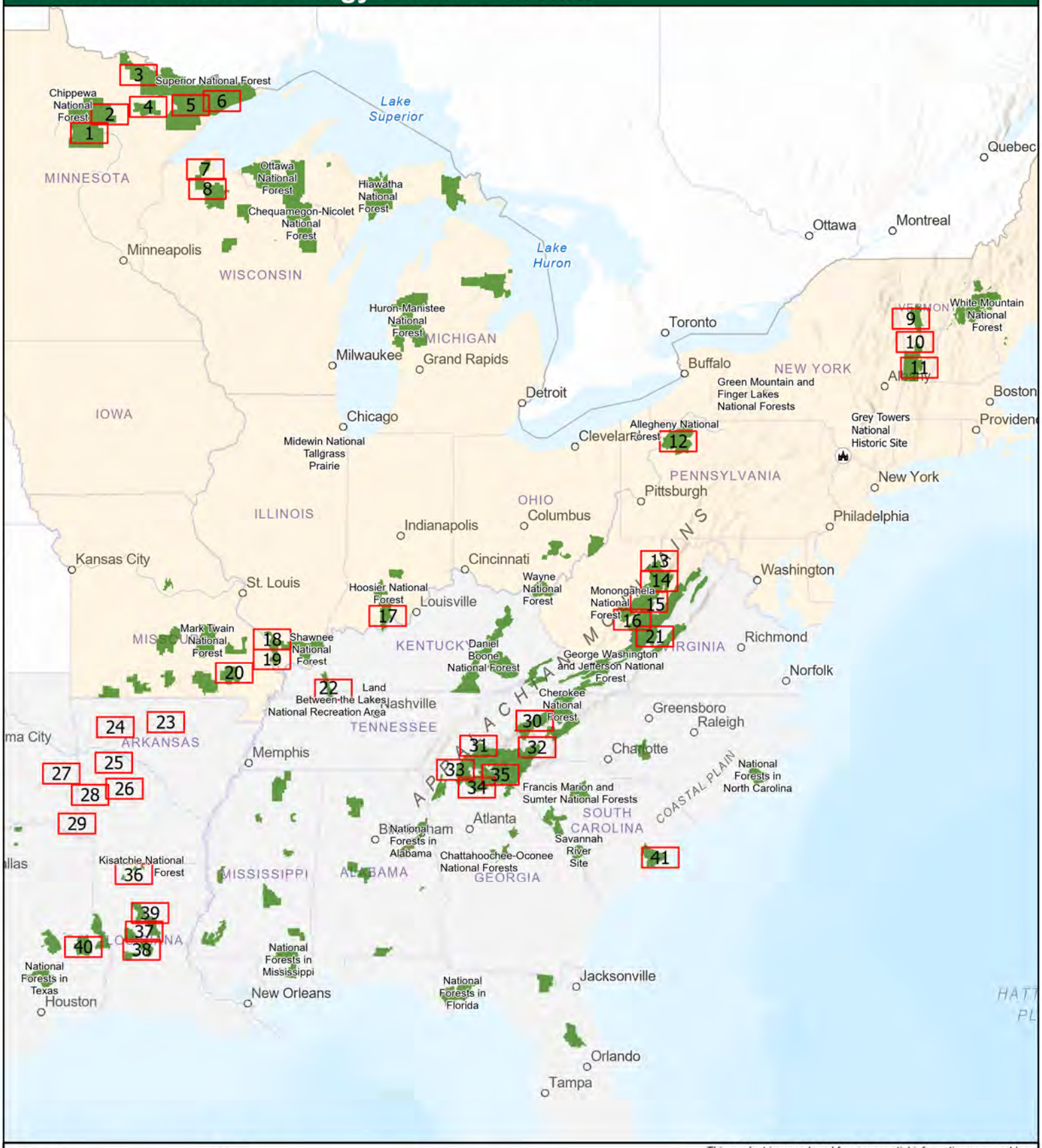

This product is reproduced from geospatial information prepared by the USDA Forest Service. Geospatial information and GIS product accuracy may vary. Using GIS products for purposes other than those for which they were created may yield inaccurate or misleading results. USDA Forest Service reserves the right to correct, update, modify or replace GIS products without notification

USDA is an equal opportunity provider, employer and lender

USFS Bat Conservation Strategy Roost Buffers

Region 9 | Chippewa NF

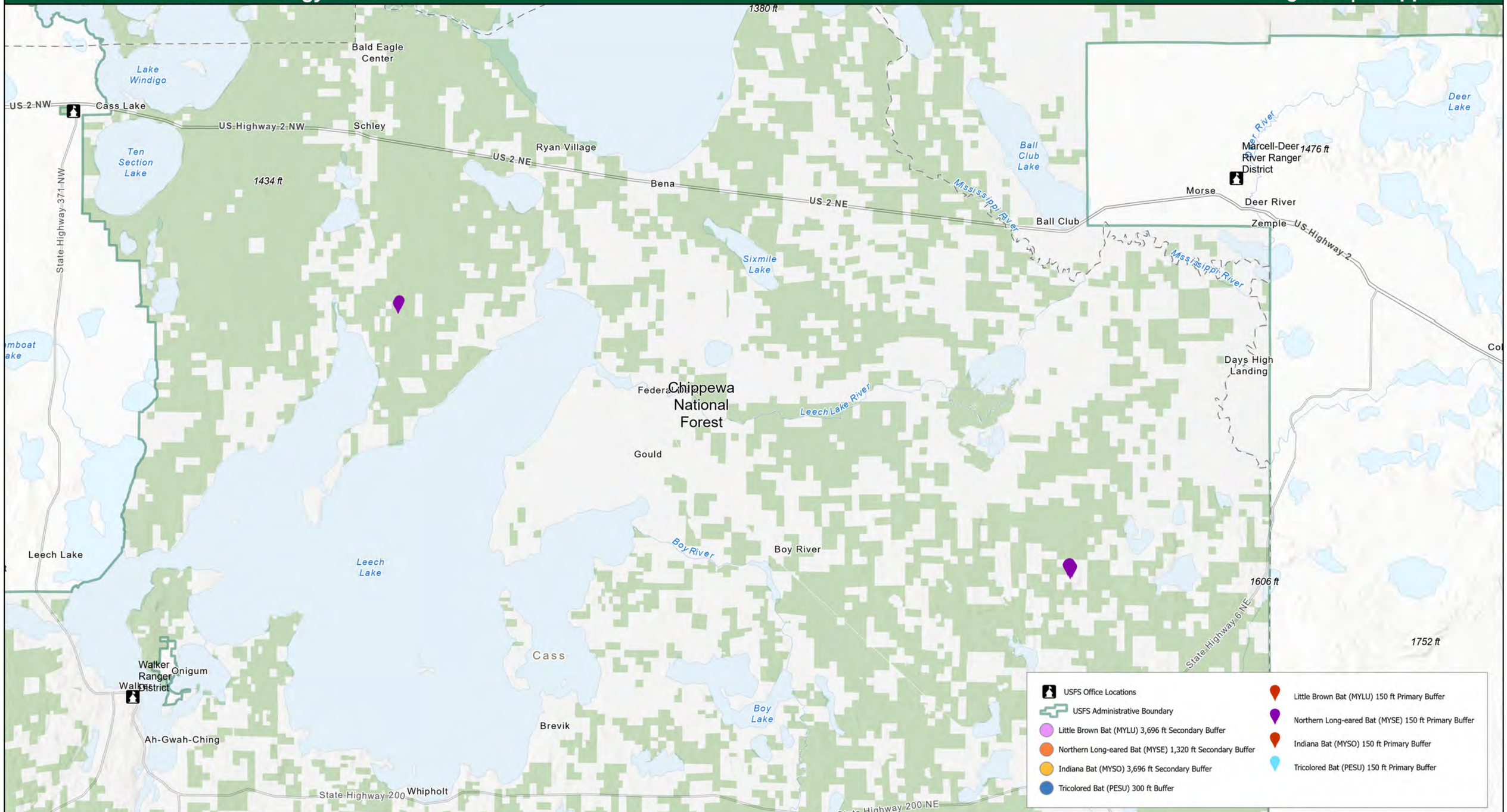

N

0 5 10 20 30 Miles

WGS 1984 Web Mercator Auxiliary Sphere

This product is reproduced from geospatial information prepared by the USDA Forest Service. Geospatial information and GIS product accuracy may vary. Using GIS products for purposes other than those for which they were created may yield inaccurate or misleading results. USDA Forest Service reserves the right to correct, update, modify or replace GIS products without notification

USDA is an equal opportunity provider, employer and lender

USFS Bat Conservation Strategy Roost Buffers

Region 9 | Chippewa NF

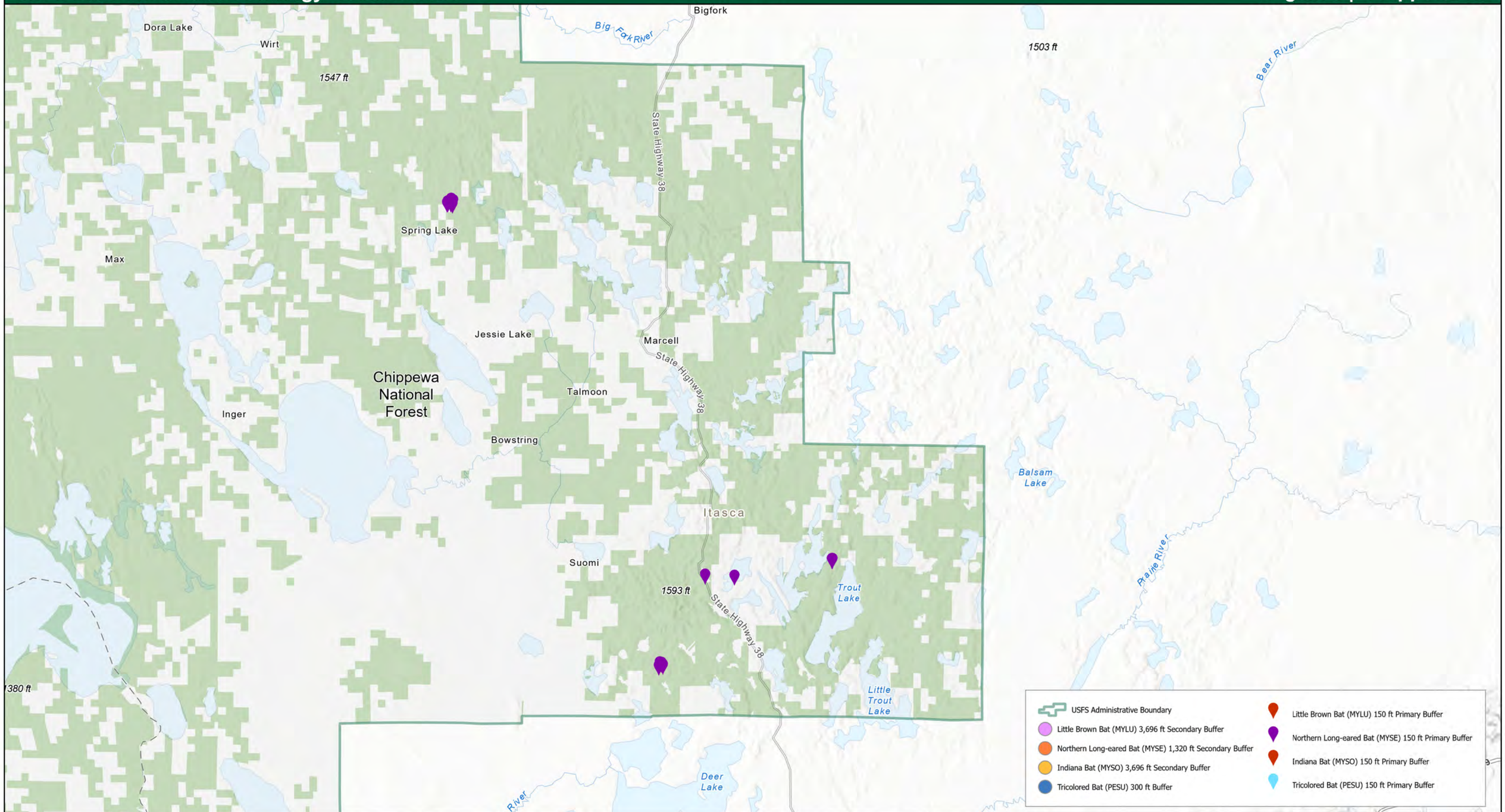

N

0 5 10 20 30 Miles

WGS 1984 Web Mercator Auxiliary Sphere

This product is reproduced from geospatial information prepared by the USDA Forest Service. Geospatial information and GIS product accuracy may vary. Using GIS products for purposes other than those for which they were created may yield inaccurate or misleading results. USDA Forest Service reserves the right to correct, update, modify or replace GIS products without notification

USDA is an equal opportunity provider, employer and lender

USFS Bat Conservation Strategy Roost Buffers

Region 9 | Superior NF

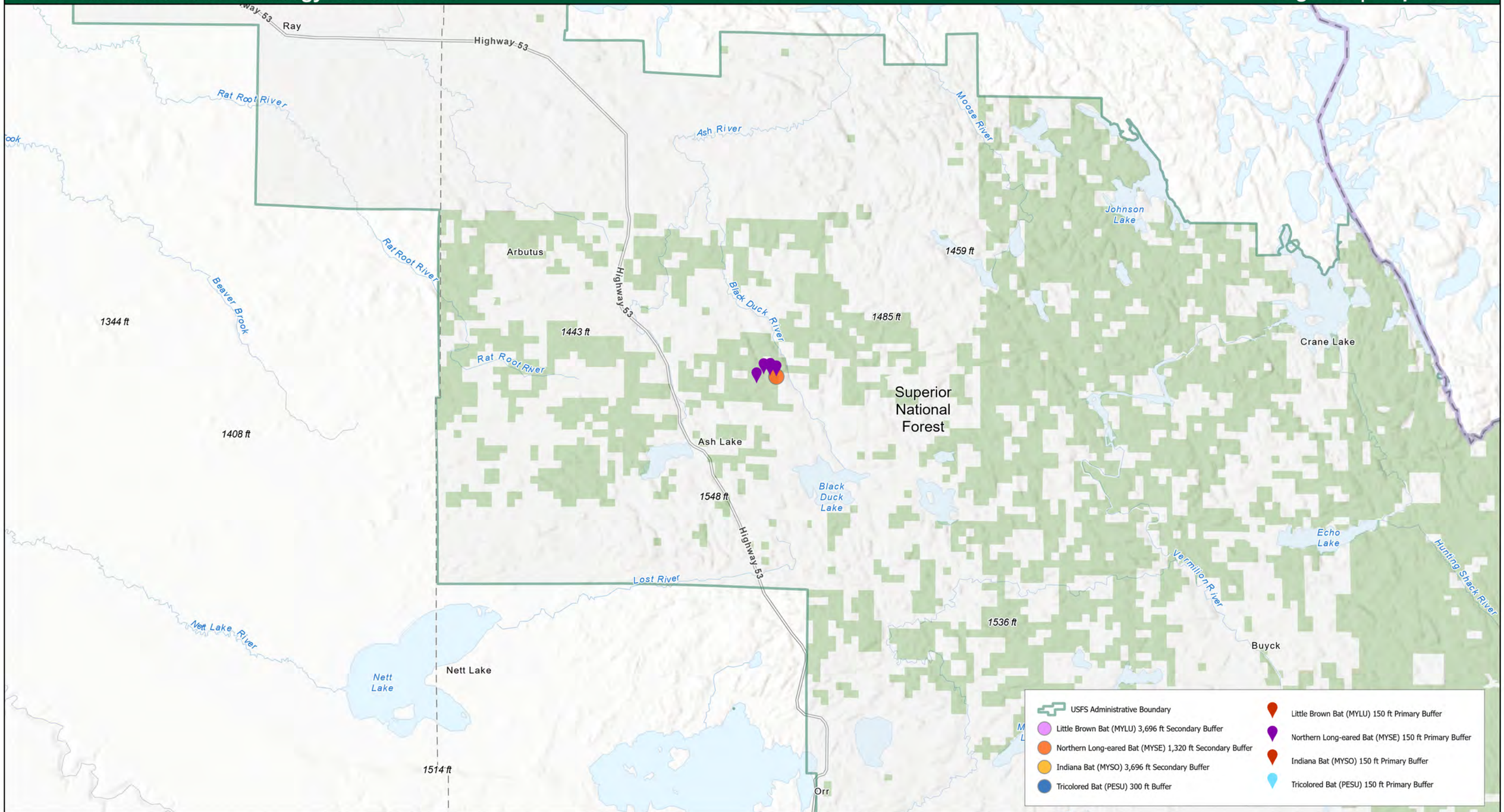

N

0 5 10 20 30 Miles

WGS 1984 Web Mercator Auxiliary Sphere

This product is reproduced from geospatial information prepared by the USDA Forest Service. Geospatial information and GIS product accuracy may vary. Using GIS products for purposes other than those for which they were created may yield inaccurate or misleading results. USDA Forest Service reserves the right to correct, update, modify or replace GIS products without notification

USDA is an equal opportunity provider, employer and lender

USFS Bat Conservation Strategy Roost Buffers

Region 9 | Superior NF

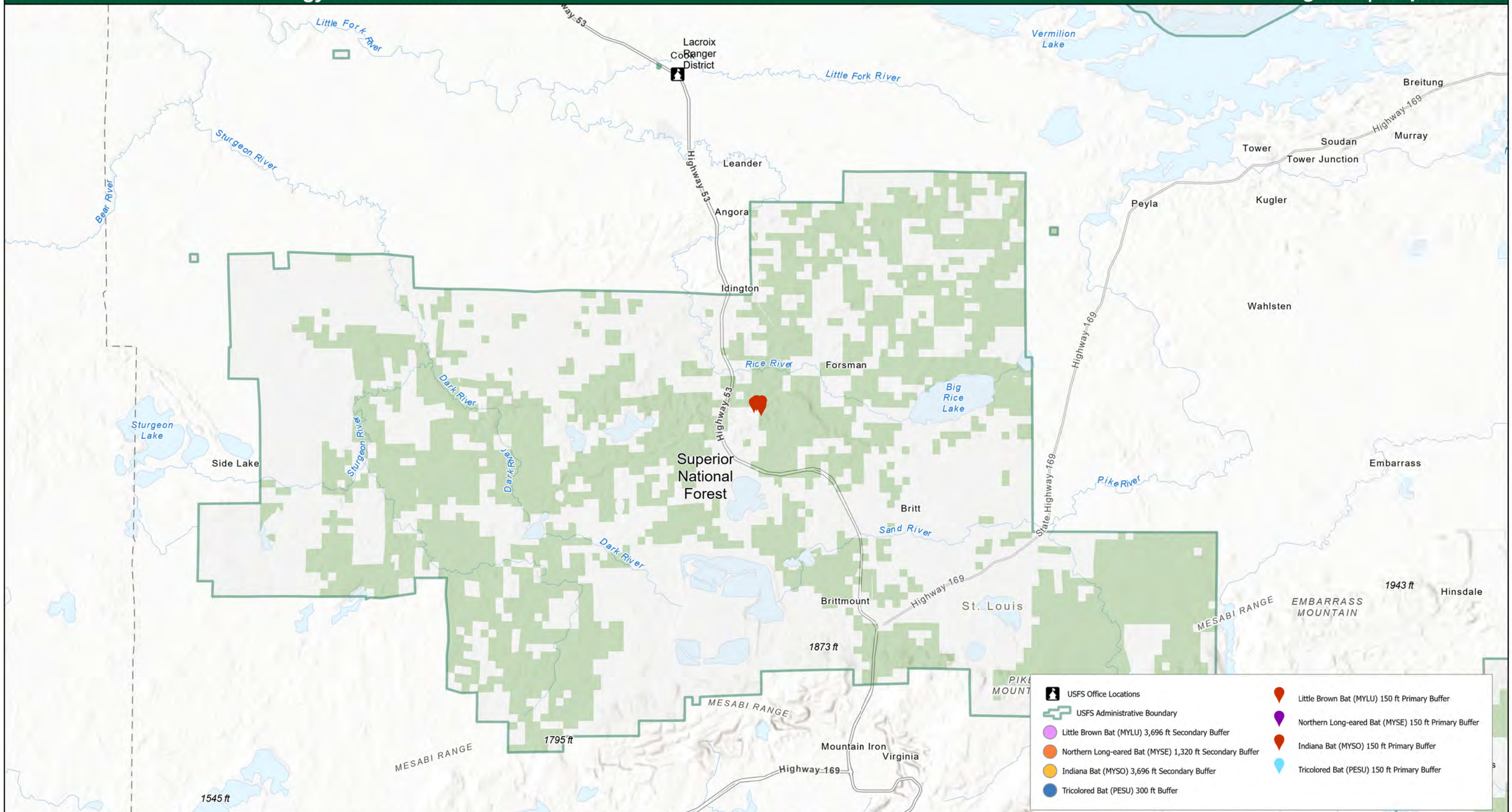

This product is reproduced from geospatial information prepared by the USDA Forest Service. Geospatial information and GIS product accuracy may vary. Using GIS products for purposes other than those for which they were created may yield inaccurate or misleading results. USDA Forest Service reserves the right to correct, update, modify or replace GIS products without notification

USDA is an equal opportunity provider, employer and lender

USFS Bat Conservation Strategy Roost Buffers

Region 9 | Superior NF

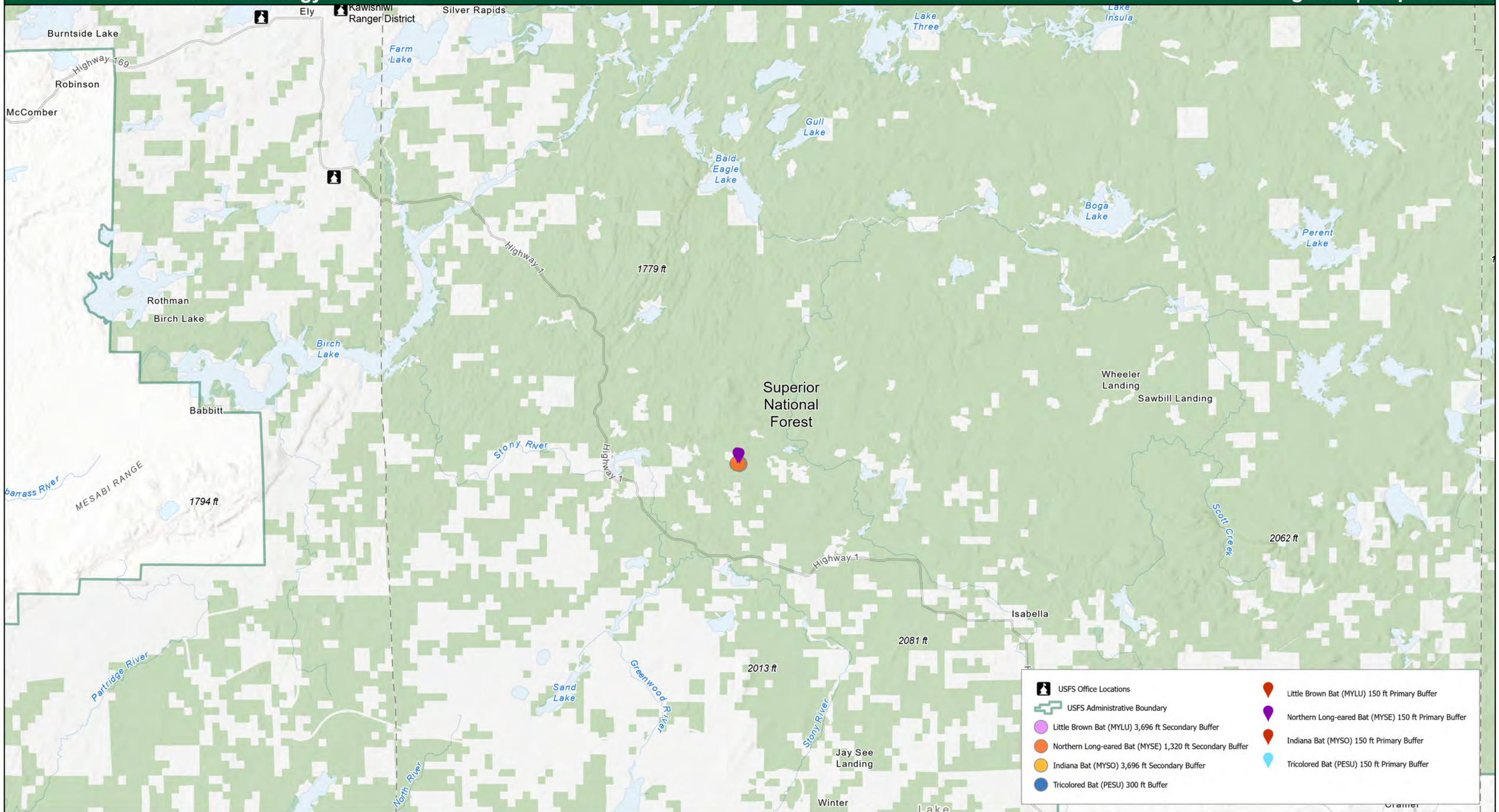

N

0 5 10 20 30 Miles

WGS 1984 Web Mercator Auxiliary Sphere

This product is reproduced from geospatial information prepared by the USDA Forest Service. Geospatial information and GIS product accuracy may vary. Using GIS products for purposes other than those for which they were created may yield inaccurate or misleading results. USDA Forest Service reserves the right to correct, update, modify or replace GIS products without notification

USDA is an equal opportunity provider, employer and lender

USFS Bat Conservation Strategy Roost Buffers

Region 9 | Superior NF

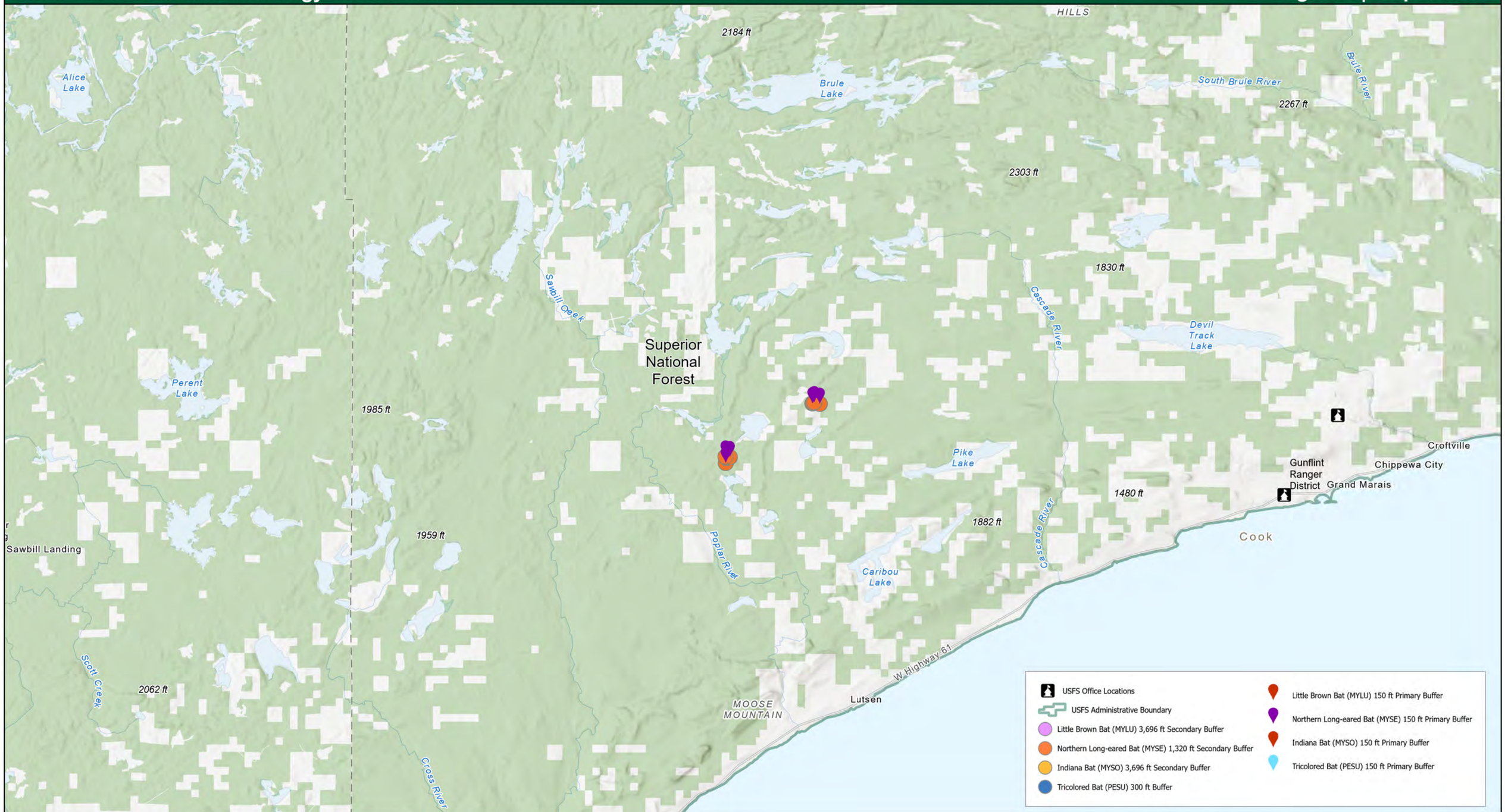

N

0 5 10 20 30 Miles

WGS 1984 Web Mercator Auxiliary Sphere

This product is reproduced from geospatial information prepared by the USDA Forest Service. Geospatial information and GIS product accuracy may vary. Using GIS products for purposes other than those for which they were created may yield inaccurate or misleading results. USDA Forest Service reserves the right to correct, update, modify or replace GIS products without notification

USDA is an equal opportunity provider, employer and lender

USFS Bat Conservation Strategy Roost Buffers

Region 9 | Chequamegon-Nicolet NF

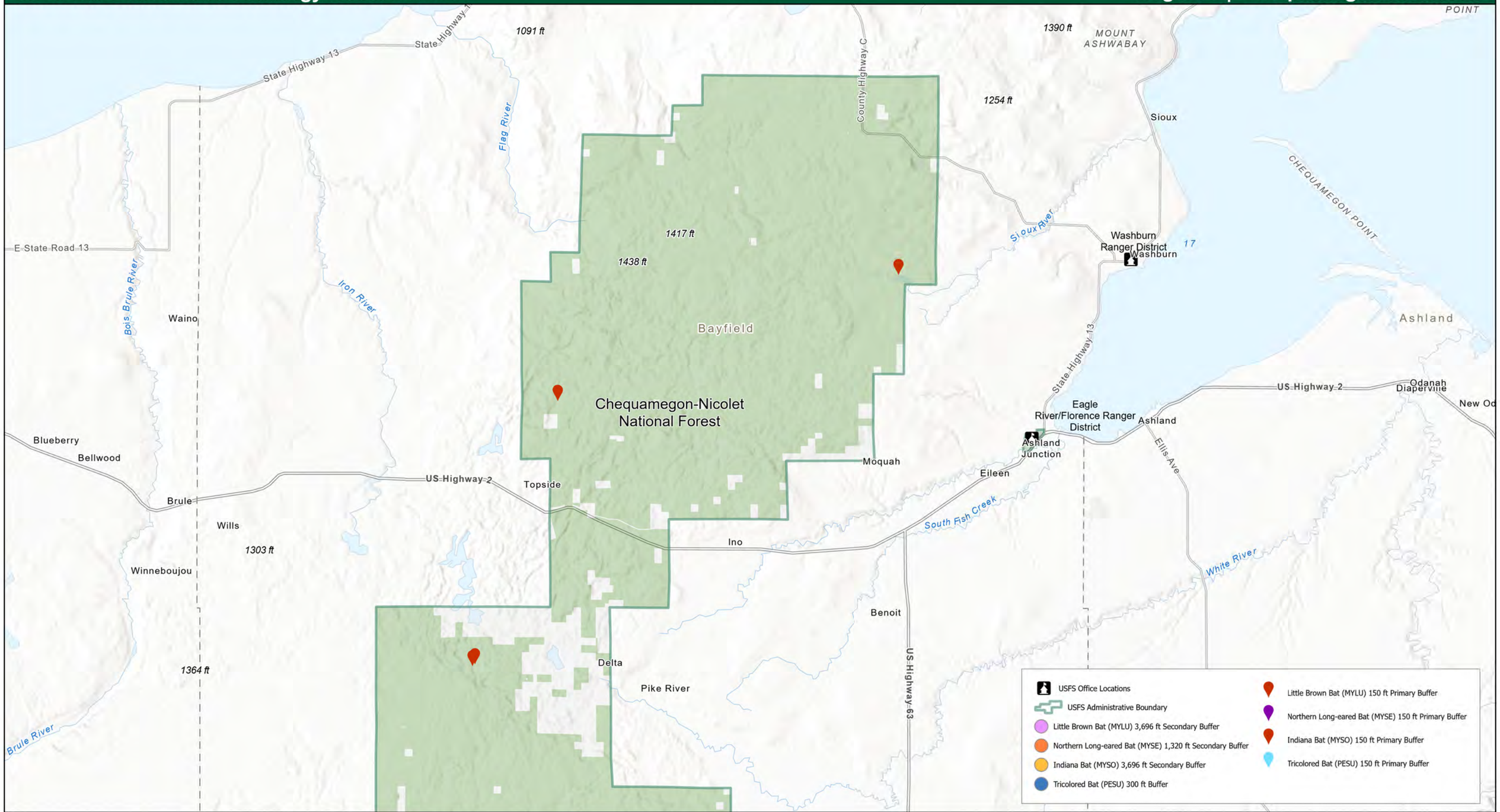

N

0 5 10 20 30 Miles

WGS 1984 Web Mercator Auxiliary Sphere

This product is reproduced from geospatial information prepared by the USDA Forest Service. Geospatial information and GIS product accuracy may vary. Using GIS products for purposes other than those for which they were created may yield inaccurate or misleading results. USDA Forest Service reserves the right to correct, update, modify or replace GIS products without notification

USDA is an equal opportunity provider, employer and lender

USFS Bat Conservation Strategy Roost Buffers

Region 9 | Chequamegon-Nicolet NF

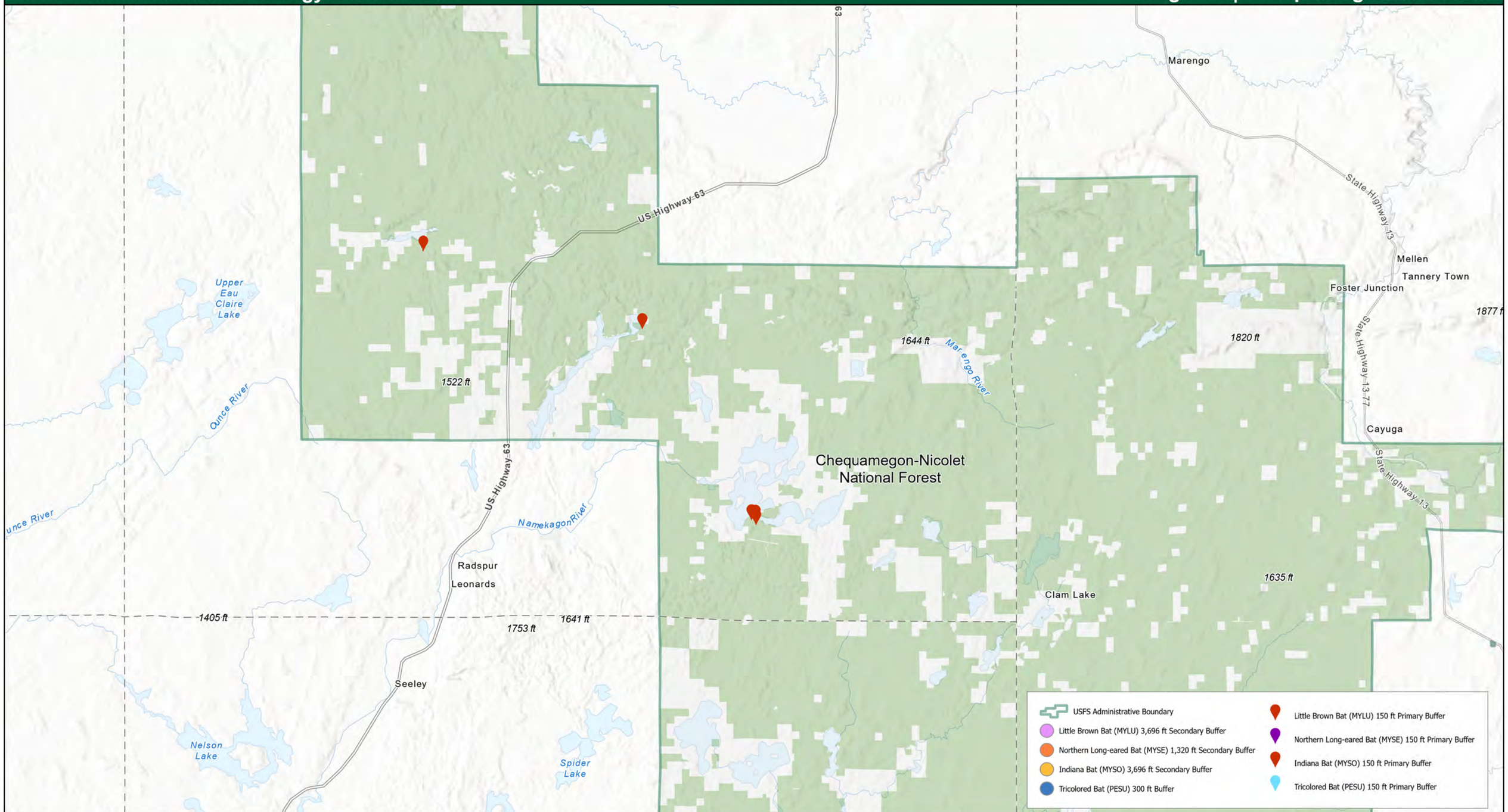

N

0 5 10 20 30 Miles

WGS 1984 Web Mercator Auxiliary Sphere

This product is reproduced from geospatial information prepared by the USDA Forest Service. Geospatial information and GIS product accuracy may vary. Using GIS products for purposes other than those for which they were created may yield inaccurate or misleading results. USDA Forest Service reserves the right to correct, update, modify or replace GIS products without notification

USDA is an equal opportunity provider, employer and lender

USFS Bat Conservation Strategy Roost Buffers

Region 9 | Green Mountain and Finger Lakes NF

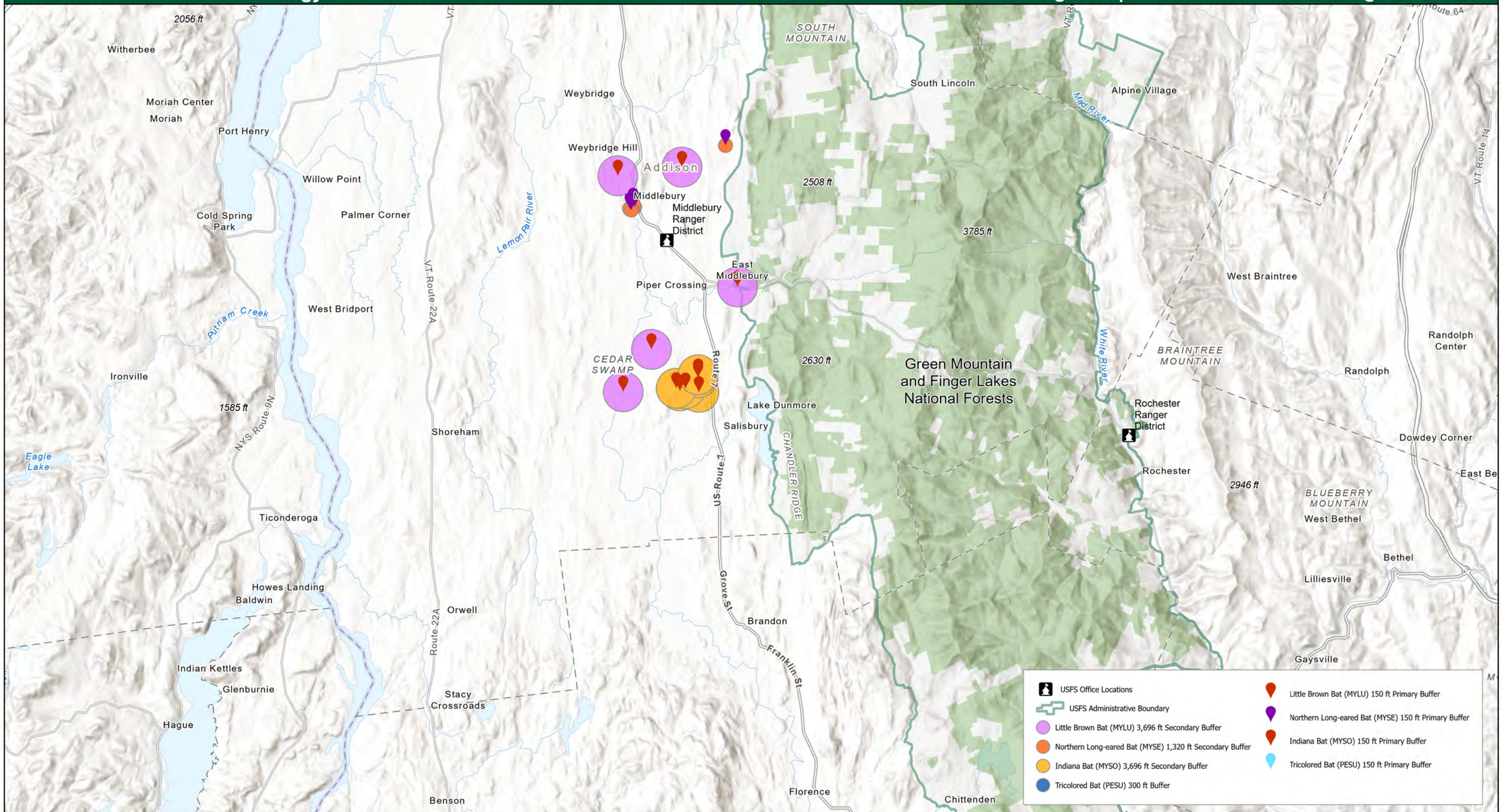

N

0 5 10 20 30 Miles

WGS 1984 Web Mercator Auxiliary Sphere

This product is reproduced from geospatial information prepared by the USDA Forest Service. Geospatial information and GIS product accuracy may vary. Using GIS products for purposes other than those for which they were created may yield inaccurate or misleading results. USDA Forest Service reserves the right to correct, update, modify or replace GIS products without notification

USDA is an equal opportunity provider, employer and lender

USFS Bat Conservation Strategy Roost Buffers

Region 9 | Green Mountain and Finger Lakes NF

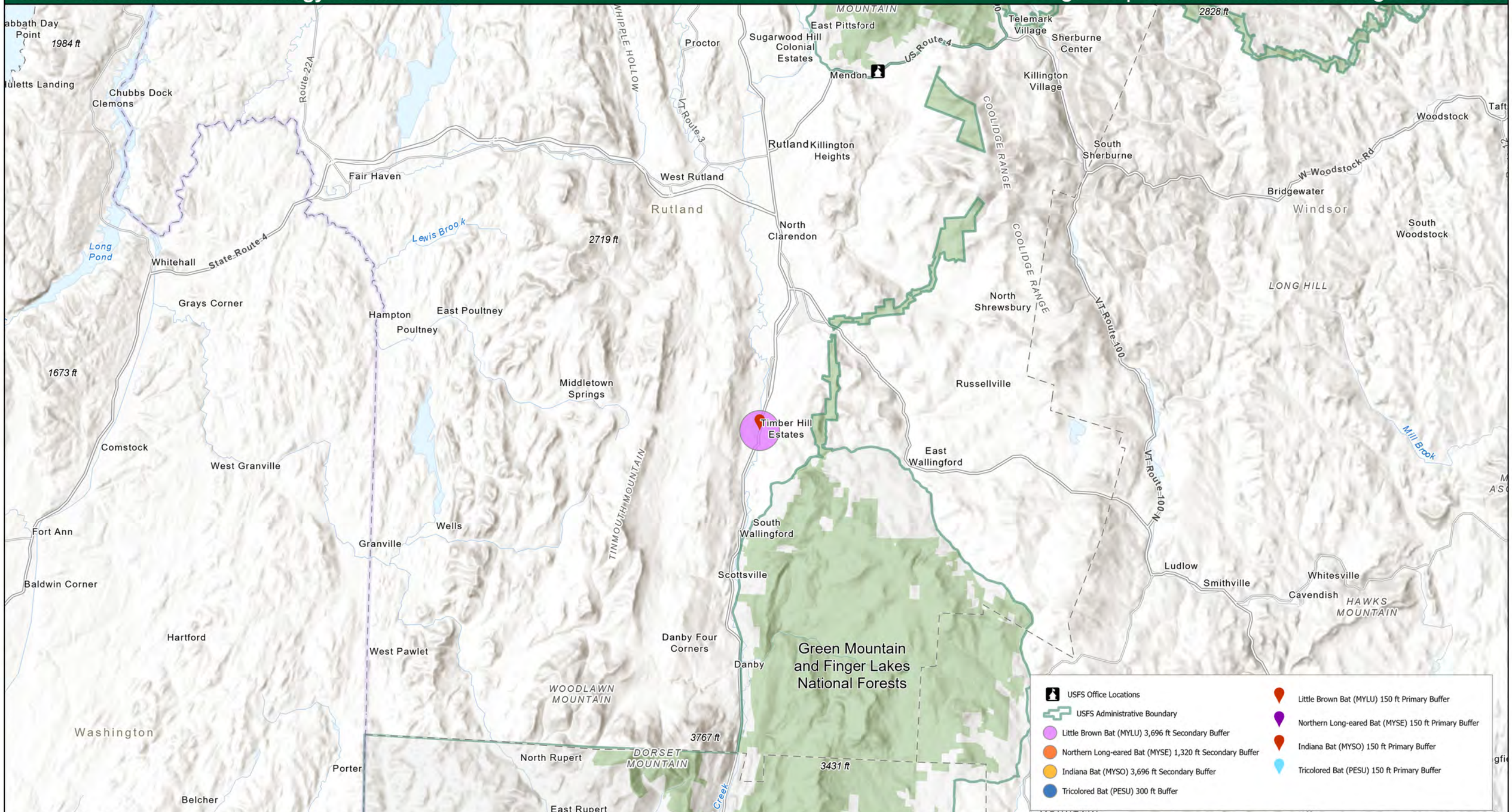

This product is reproduced from geospatial information prepared by the USDA Forest Service. Geospatial information and GIS product accuracy may vary. Using GIS products for purposes other than those for which they were created may yield inaccurate or misleading results. USDA Forest Service reserves the right to correct, update, modify or replace GIS products without notification

USDA is an equal opportunity provider, employer and lender

USFS Bat Conservation Strategy Roost Buffers

Region 9 | Green Mountain and Finger Lakes NF

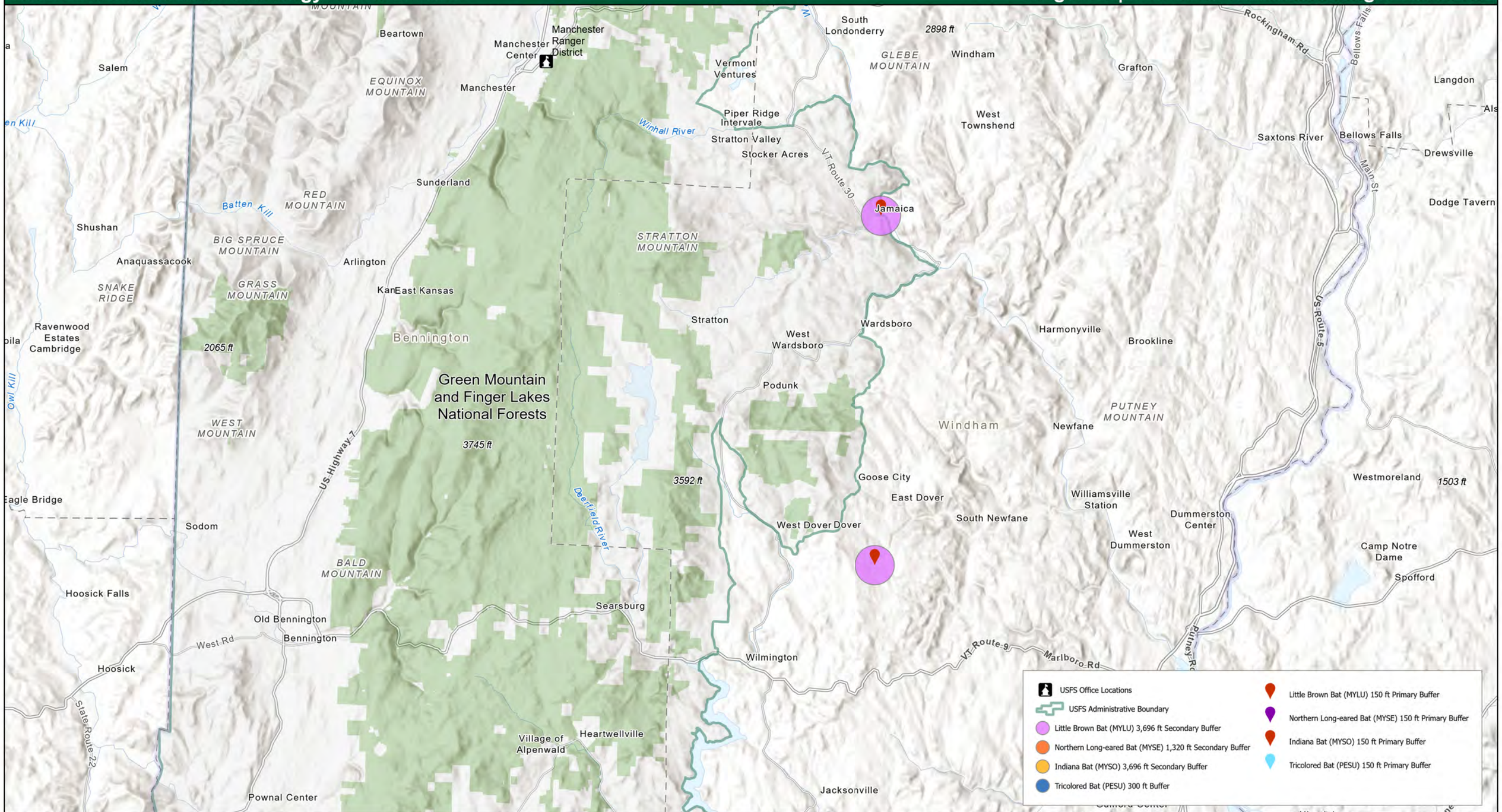

WGS 1984 Web Mercator Auxiliary Sphere

This product is reproduced from geospatial information prepared by the USDA Forest Service. Geospatial information and GIS product accuracy may vary. Using GIS products for purposes other than those for which they were created may yield inaccurate or misleading results. USDA Forest Service reserves the right to correct, update, modify or replace GIS products without notification

USDA is an equal opportunity provider, employer and lender

USFS Bat Conservation Strategy Roost Buffers

Region 9 | Allegheny NF

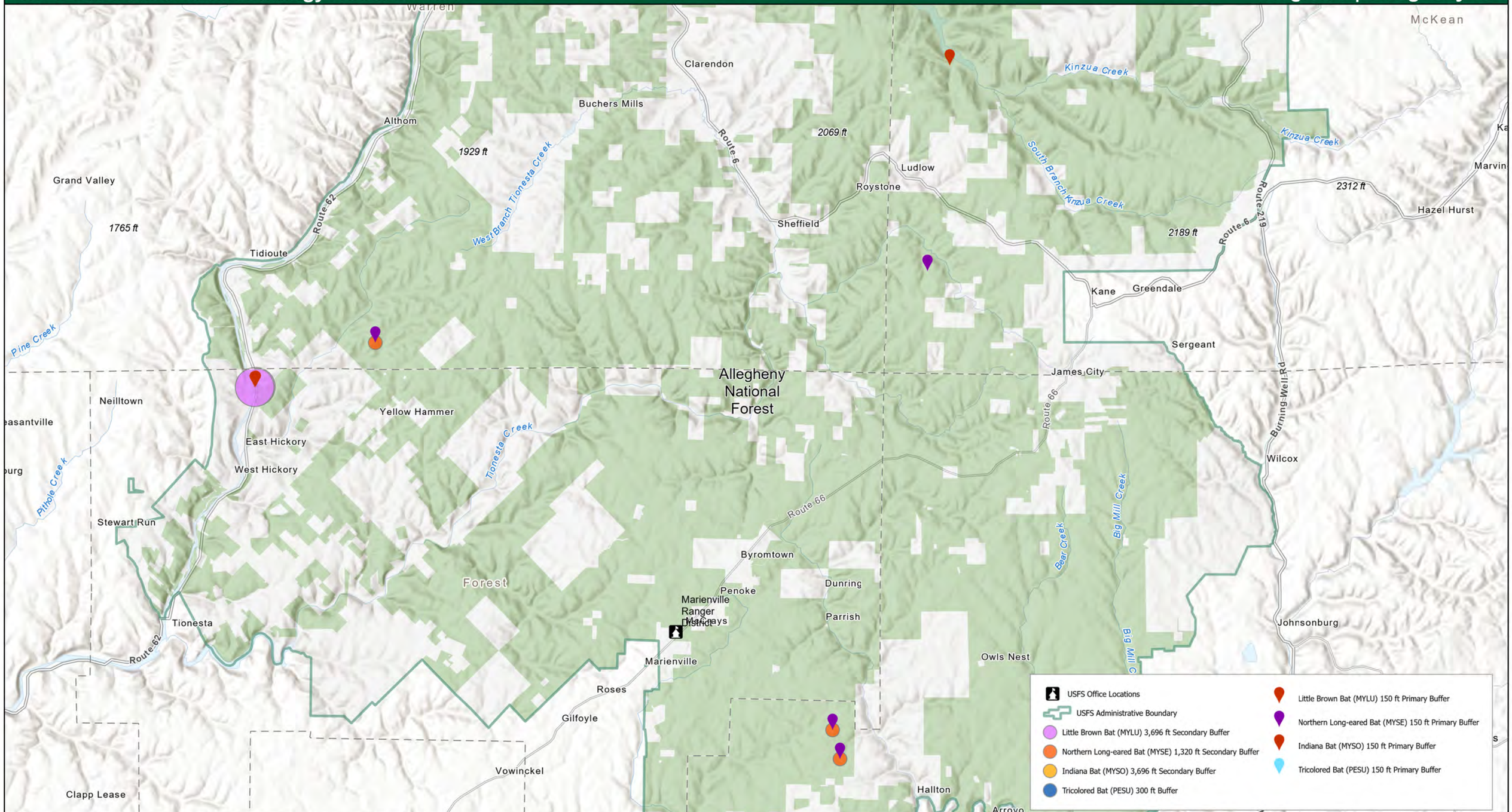

N

0 5 10 20 30 Miles

WGS 1984 Web Mercator Auxiliary Sphere

This product is reproduced from geospatial information prepared by the USDA Forest Service. Geospatial information and GIS product accuracy may vary. Using GIS products for purposes other than those for which they were created may yield inaccurate or misleading results. USDA Forest Service reserves the right to correct, update, modify or replace GIS products without notification

USDA is an equal opportunity provider, employer and lender

USFS Bat Conservation Strategy Roost Buffers

Region 9 | Monongahela NF

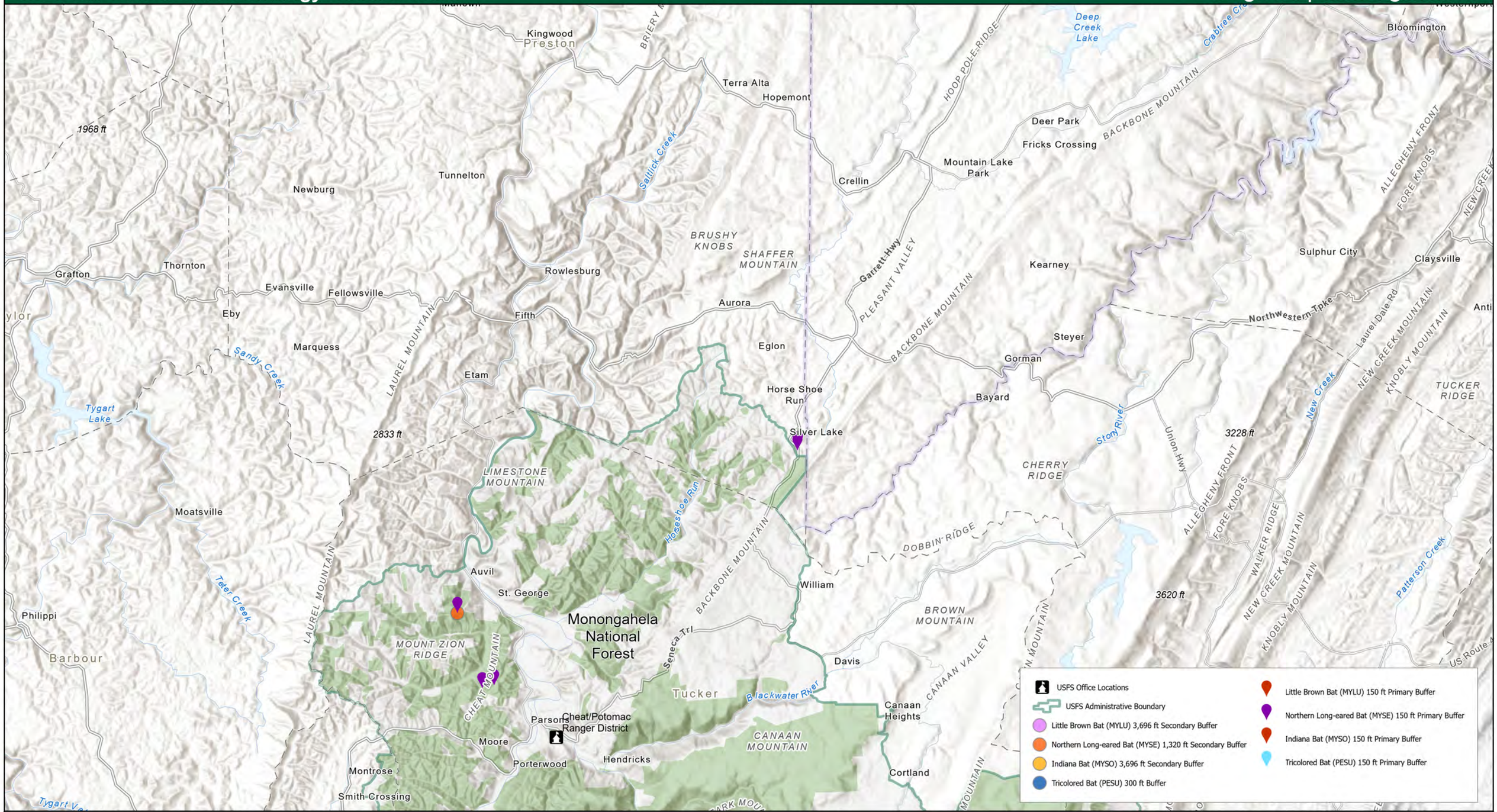

This product is reproduced from geospatial information prepared by the USDA Forest Service. Geospatial information and GIS product accuracy may vary. Using GIS products for purposes other than those for which they were created may yield inaccurate or misleading results. USDA Forest Service reserves the right to correct, update, modify or replace GIS products without notification

USDA is an equal opportunity provider, employer and lender

USFS Bat Conservation Strategy Roost Buffers

Region 9 | Monongahela NF

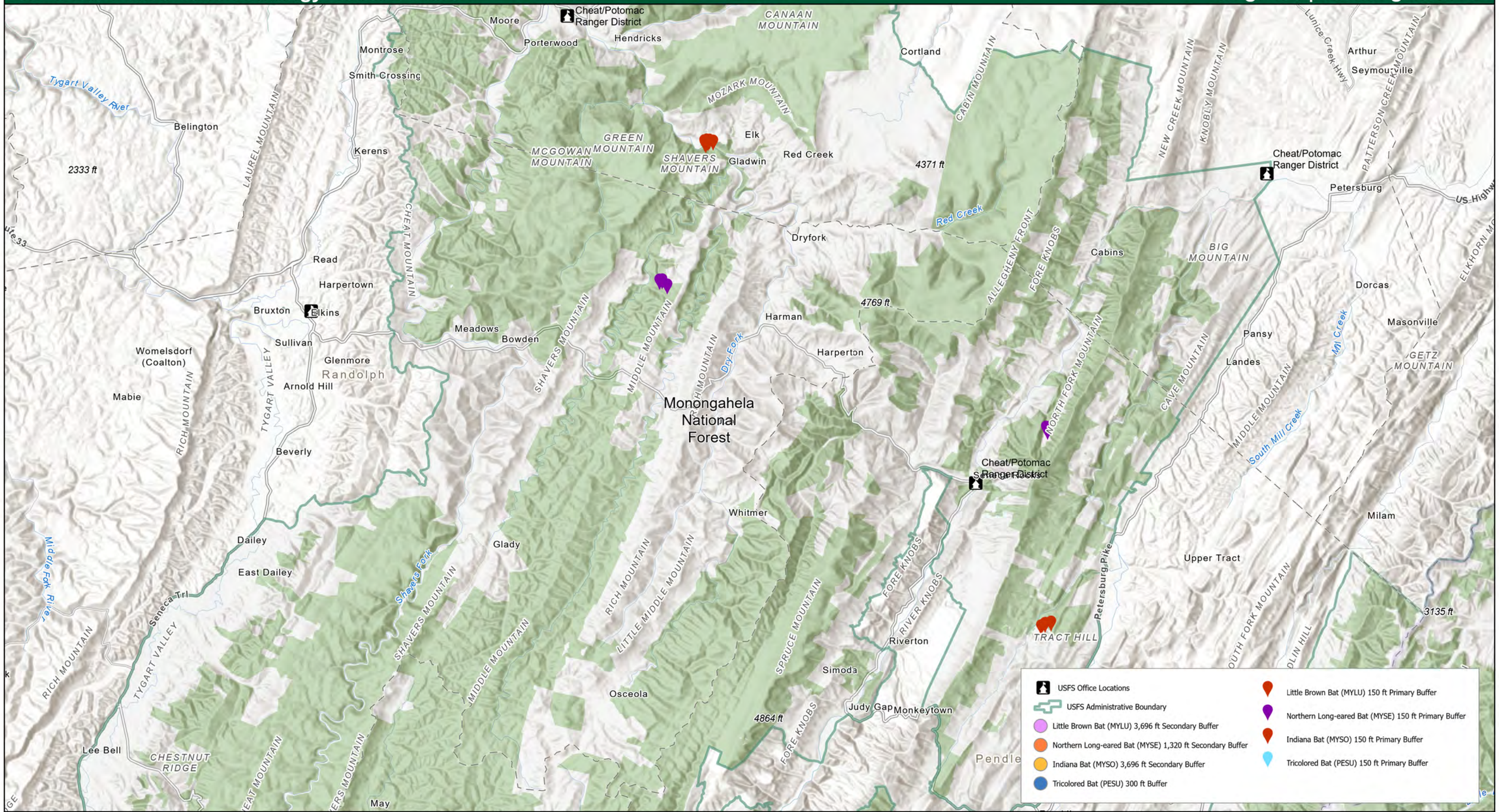

This product is reproduced from geospatial information prepared by the USDA Forest Service. Geospatial information and GIS product accuracy may vary. Using GIS products for purposes other than those for which they were created may yield inaccurate or misleading results. USDA Forest Service reserves the right to correct, update, modify or replace GIS products without notification

USDA is an equal opportunity provider, employer and lender

USFS Bat Conservation Strategy Roost Buffers

Region 9 | Monongahela NF

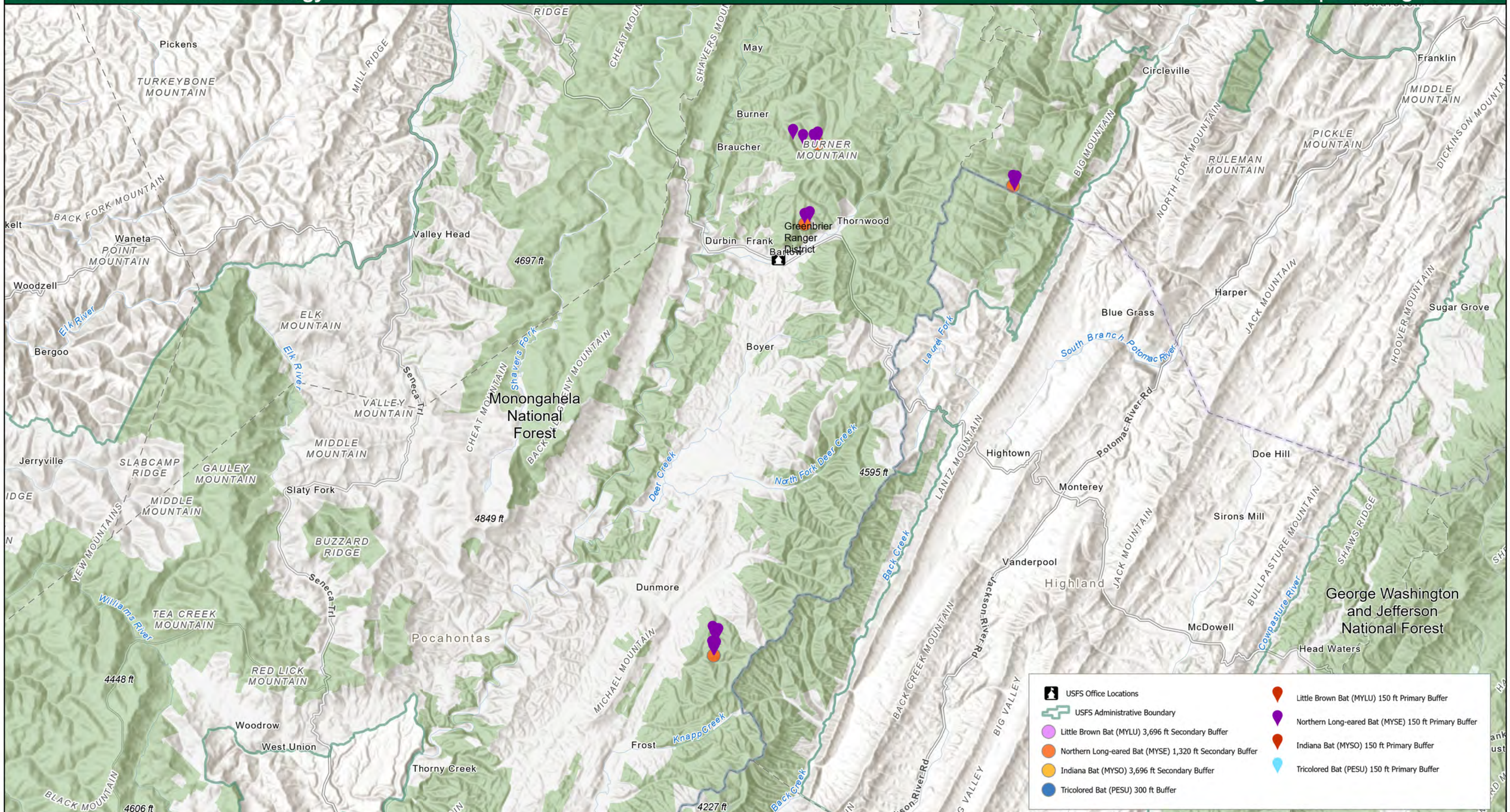

N

0 5 10 20 30 Miles

WGS 1984 Web Mercator Auxiliary Sphere

This product is reproduced from geospatial information prepared by the USDA Forest Service. Geospatial information and GIS product accuracy may vary. Using GIS products for purposes other than those for which they were created may yield inaccurate or misleading results. USDA Forest Service reserves the right to correct, update, modify or replace GIS products without notification

USDA is an equal opportunity provider, employer and lender

USFS Bat Conservation Strategy Roost Buffers

Region 9 | Monongahela NF

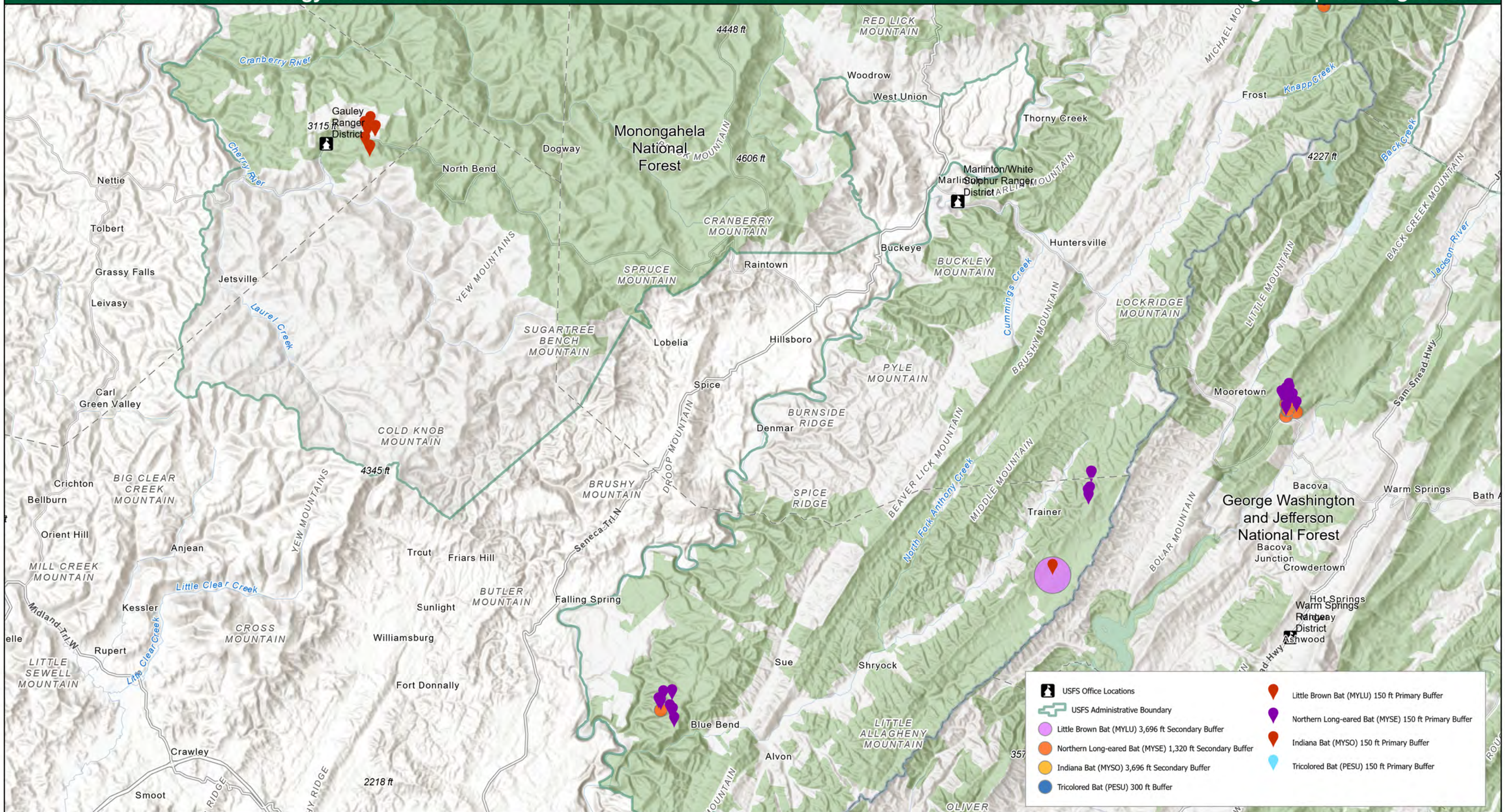

N

0 5 10 20 30 Miles

WGS 1984 Web Mercator Auxiliary Sphere

This product is reproduced from geospatial information prepared by the USDA Forest Service. Geospatial information and GIS product accuracy may vary. Using GIS products for purposes other than those for which they were created may yield inaccurate or misleading results. USDA Forest Service reserves the right to correct, update, modify or replace GIS products without notification

USDA is an equal opportunity provider, employer and lender

USFS Bat Conservation Strategy Roost Buffers

Region 9 | Hoosier NF

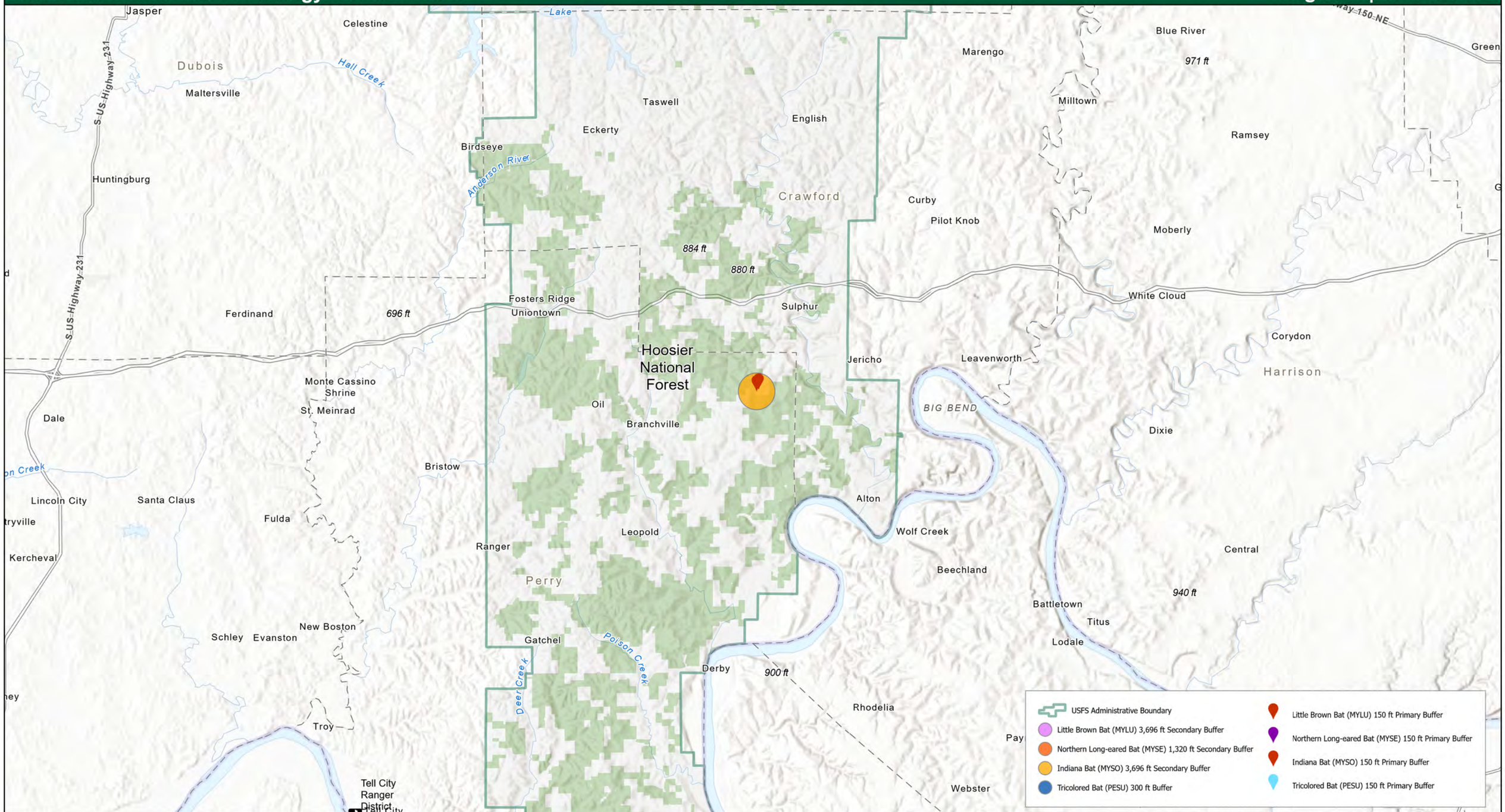

This product is reproduced from geospatial information prepared by the USDA Forest Service. Geospatial information and GIS product accuracy may vary. Using GIS products for purposes other than those for which they were created may yield inaccurate or misleading results. USDA Forest Service reserves the right to correct, update, modify or replace GIS products without notification

USDA is an equal opportunity provider, employer and lender

USFS Bat Conservation Strategy Roost Buffers

Region 9 | Shawnee NF

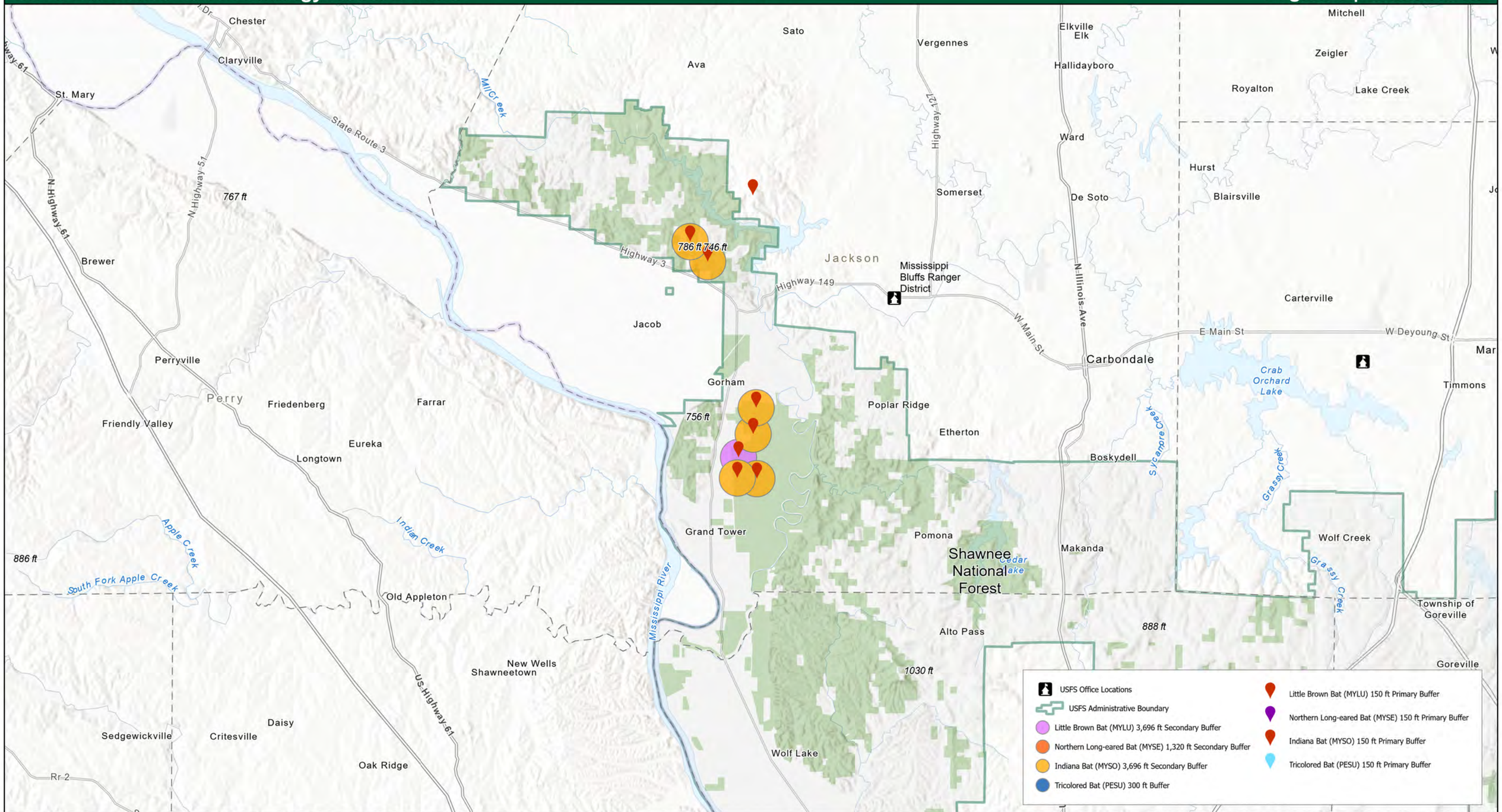

N

0 5 10 20 30 Miles

WGS 1984 Web Mercator Auxiliary Sphere

This product is reproduced from geospatial information prepared by the USDA Forest Service. Geospatial information and GIS product accuracy may vary. Using GIS products for purposes other than those for which they were created may yield inaccurate or misleading results. USDA Forest Service reserves the right to correct, update, modify or replace GIS products without notification

USDA is an equal opportunity provider, employer and lender

USFS Bat Conservation Strategy Roost Buffers

Region 9 | Shawnee NF

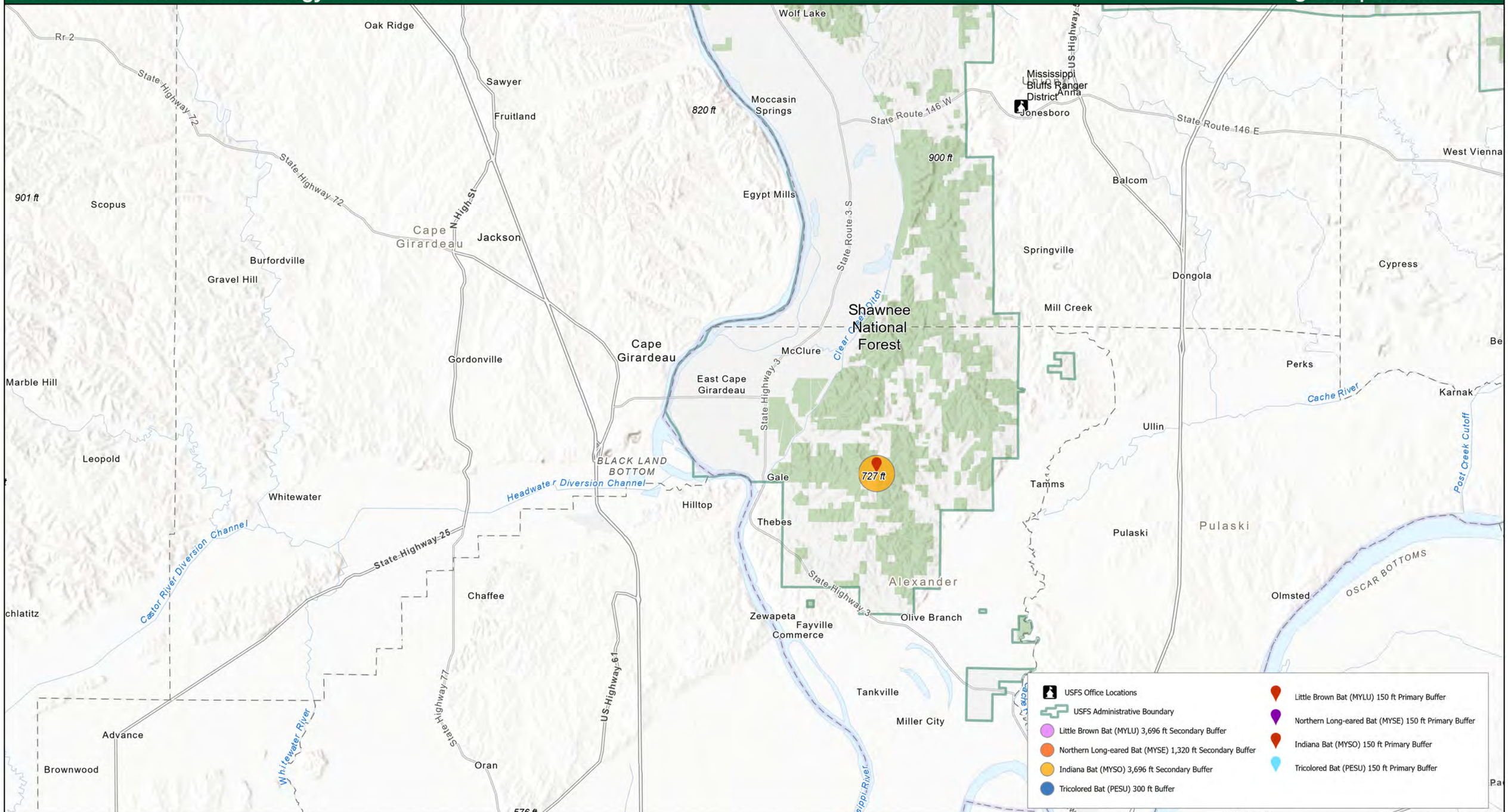

This product is reproduced from geospatial information prepared by the USDA Forest Service. Geospatial information and GIS product accuracy may vary. Using GIS products for purposes other than those for which they were created may yield inaccurate or misleading results. USDA Forest Service reserves the right to correct, update, modify or replace GIS products without notification

USDA is an equal opportunity provider, employer and lender

USFS Bat Conservation Strategy Roost Buffers

Region 9 | Mark Twain NF

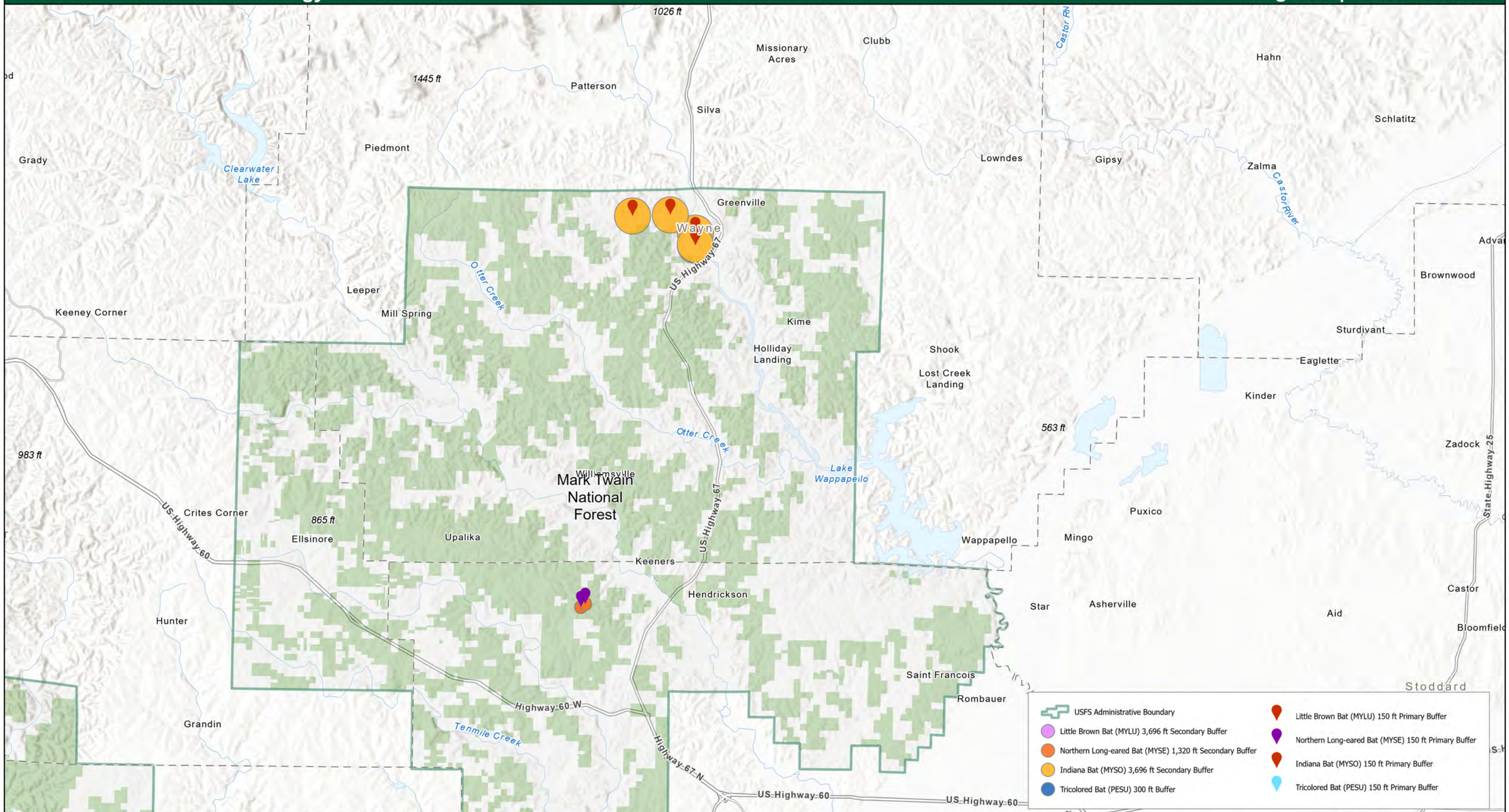

N

0 5 10 20 30 Miles

WGS 1984 Web Mercator Auxiliary Sphere

This product is reproduced from geospatial information prepared by the USDA Forest Service. Geospatial information and GIS product accuracy may vary. Using GIS products for purposes other than those for which they were created may yield inaccurate or misleading results. USDA Forest Service reserves the right to correct, update, modify or replace GIS products without notification

USDA is an equal opportunity provider, employer and lender

USFS Bat Conservation Strategy Roost Buffers

Region 8 | George Washington and Jefferson NF

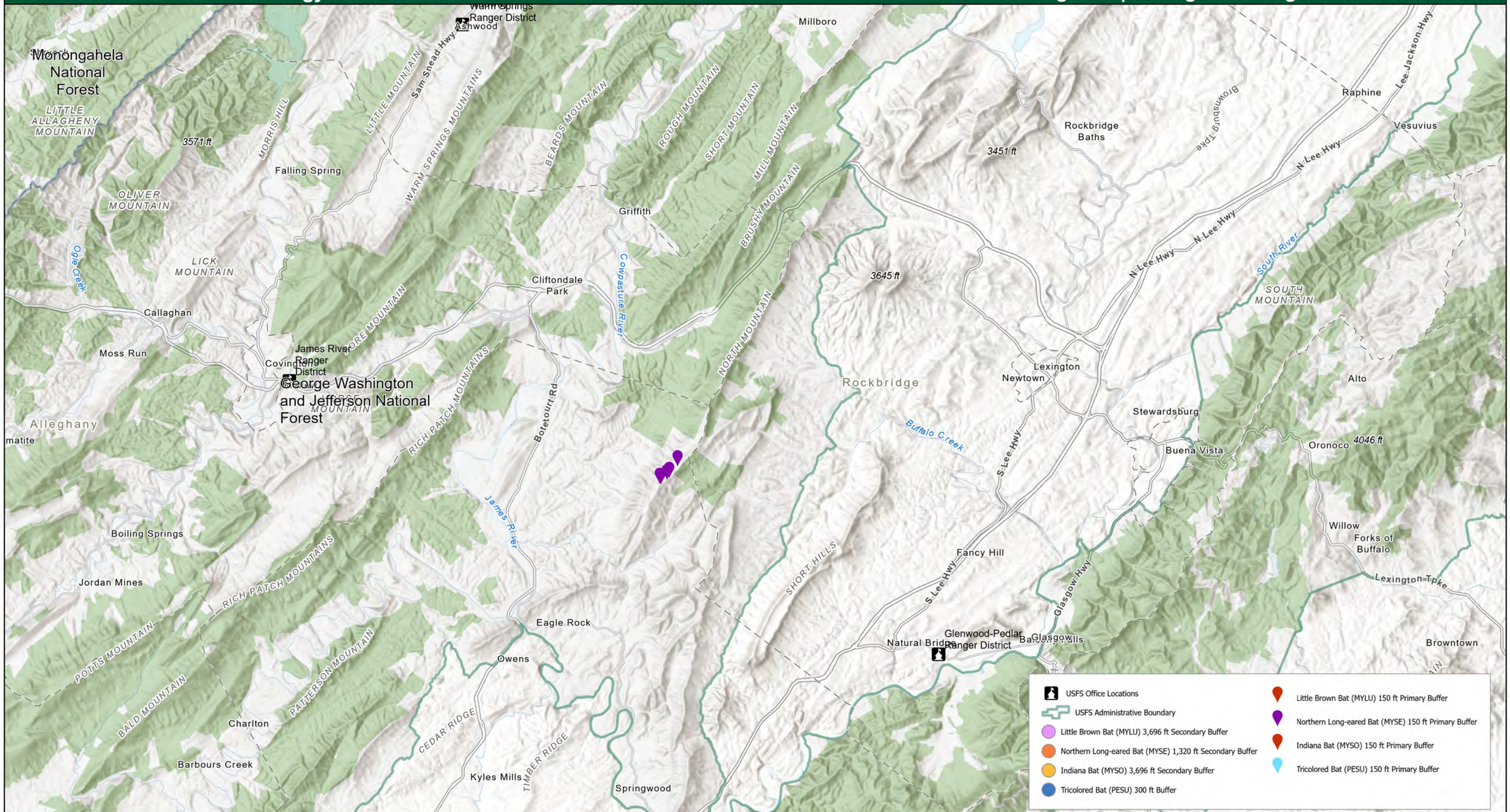

N

0 5 10 20 30 Miles

WGS 1984 Web Mercator Auxiliary Sphere

This product is reproduced from geospatial information prepared by the USDA Forest Service. Geospatial information and GIS product accuracy may vary. Using GIS products for purposes other than those for which they were created may yield inaccurate or misleading results. USDA Forest Service reserves the right to correct, update, modify or replace GIS products without notification

USDA is an equal opportunity provider, employer and lender

USFS Bat Conservation Strategy Roost Buffers

Region 8 | Land Between the Lake NRA

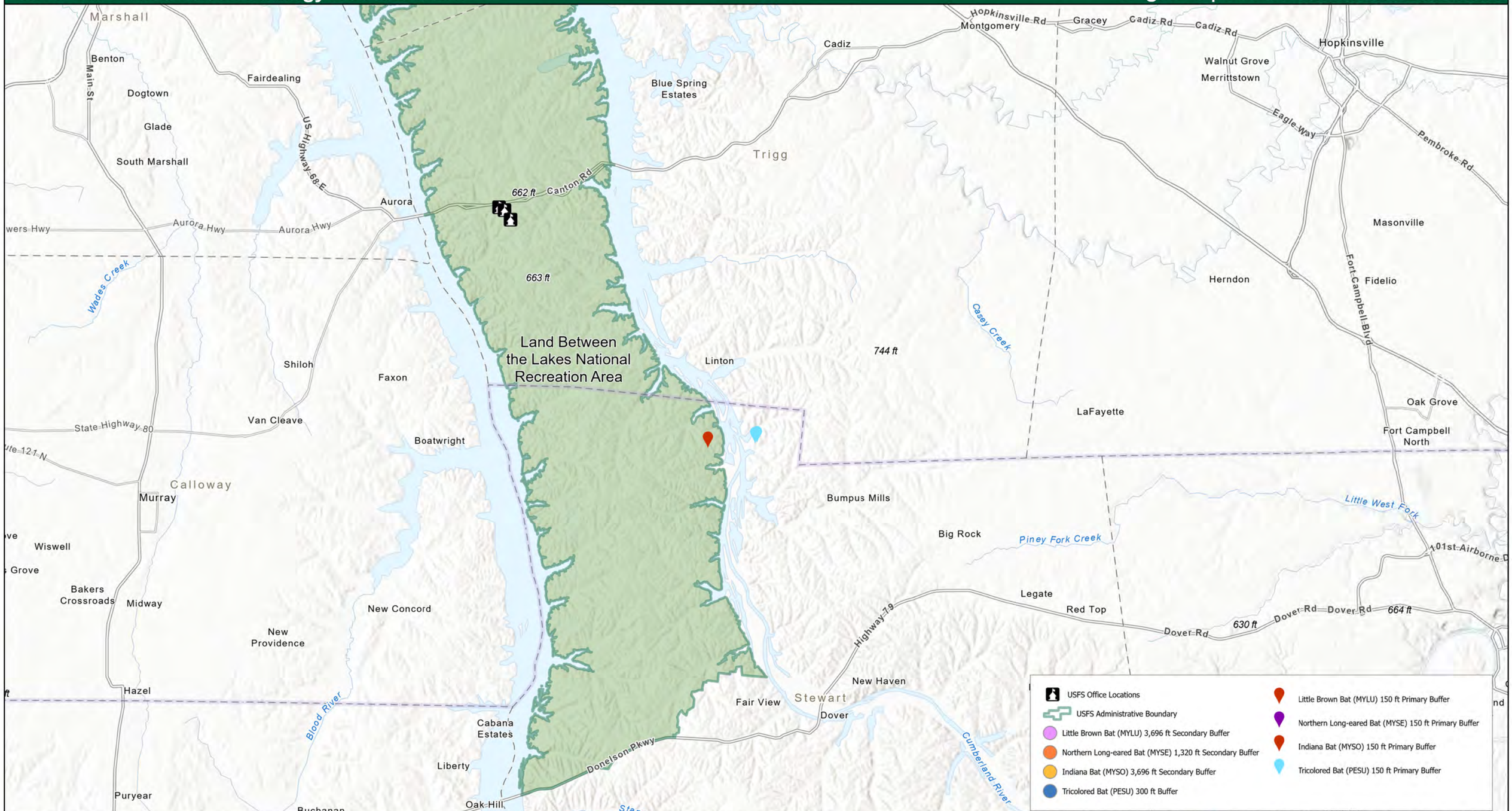

This product is reproduced from geospatial information prepared by the USDA Forest Service. Geospatial information and GIS product accuracy may vary. Using GIS products for purposes other than those for which they were created may yield inaccurate or misleading results. USDA Forest Service reserves the right to correct, update, modify or replace GIS products without notification

USDA is an equal opportunity provider, employer and lender

USFS Bat Conservation Strategy Roost Buffers

Region 8 | Ozark - St. Francis NF

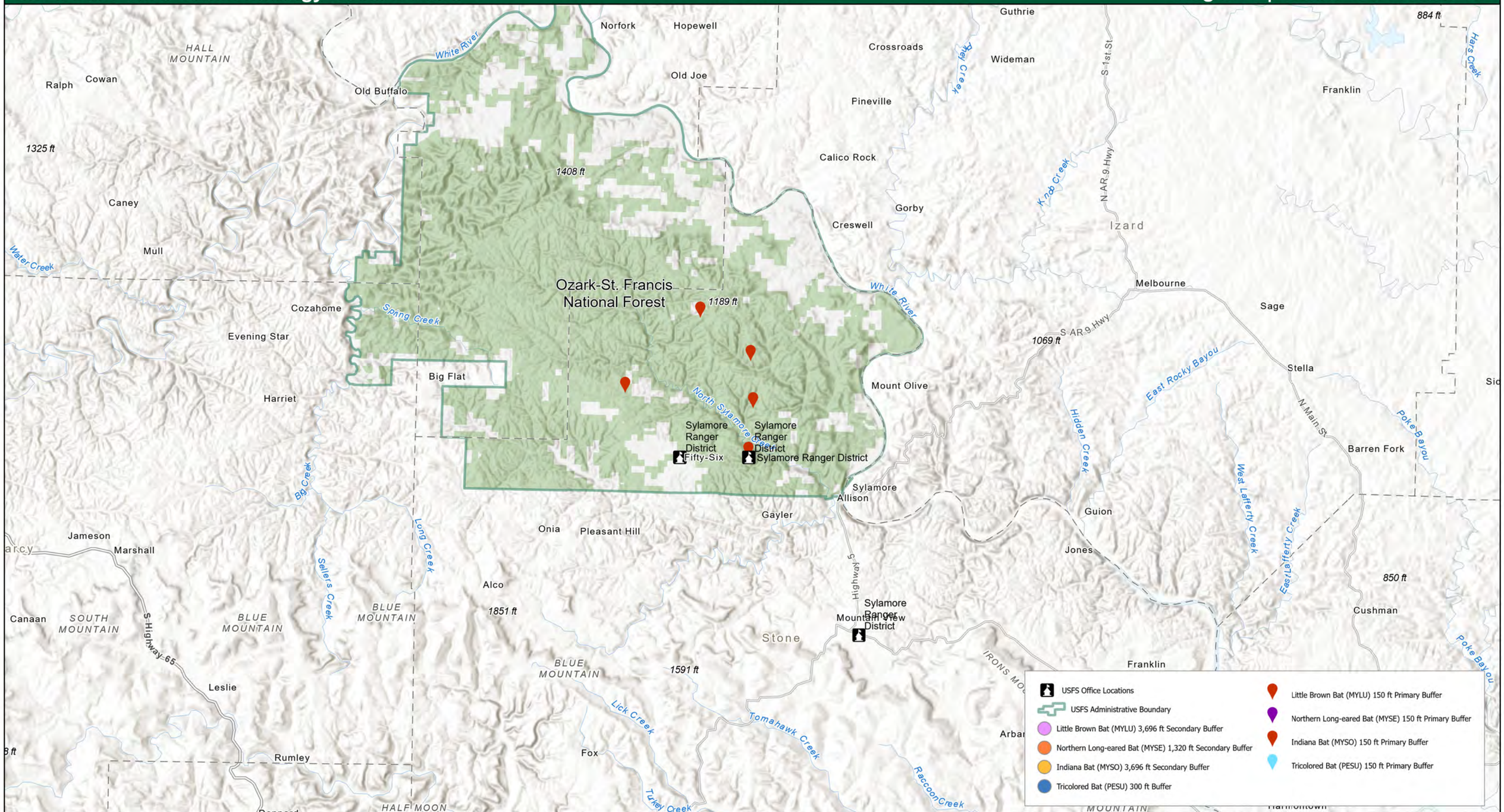

N

0 5 10 20 30 Miles

WGS 1984 Web Mercator Auxiliary Sphere

This product is reproduced from geospatial information prepared by the USDA Forest Service. Geospatial information and GIS product accuracy may vary. Using GIS products for purposes other than those for which they were created may yield inaccurate or misleading results. USDA Forest Service reserves the right to correct, update, modify or replace GIS products without notification

USDA is an equal opportunity provider, employer and lender

USFS Bat Conservation Strategy Roost Buffers

Region 8 | Ozark - St. Francis NF

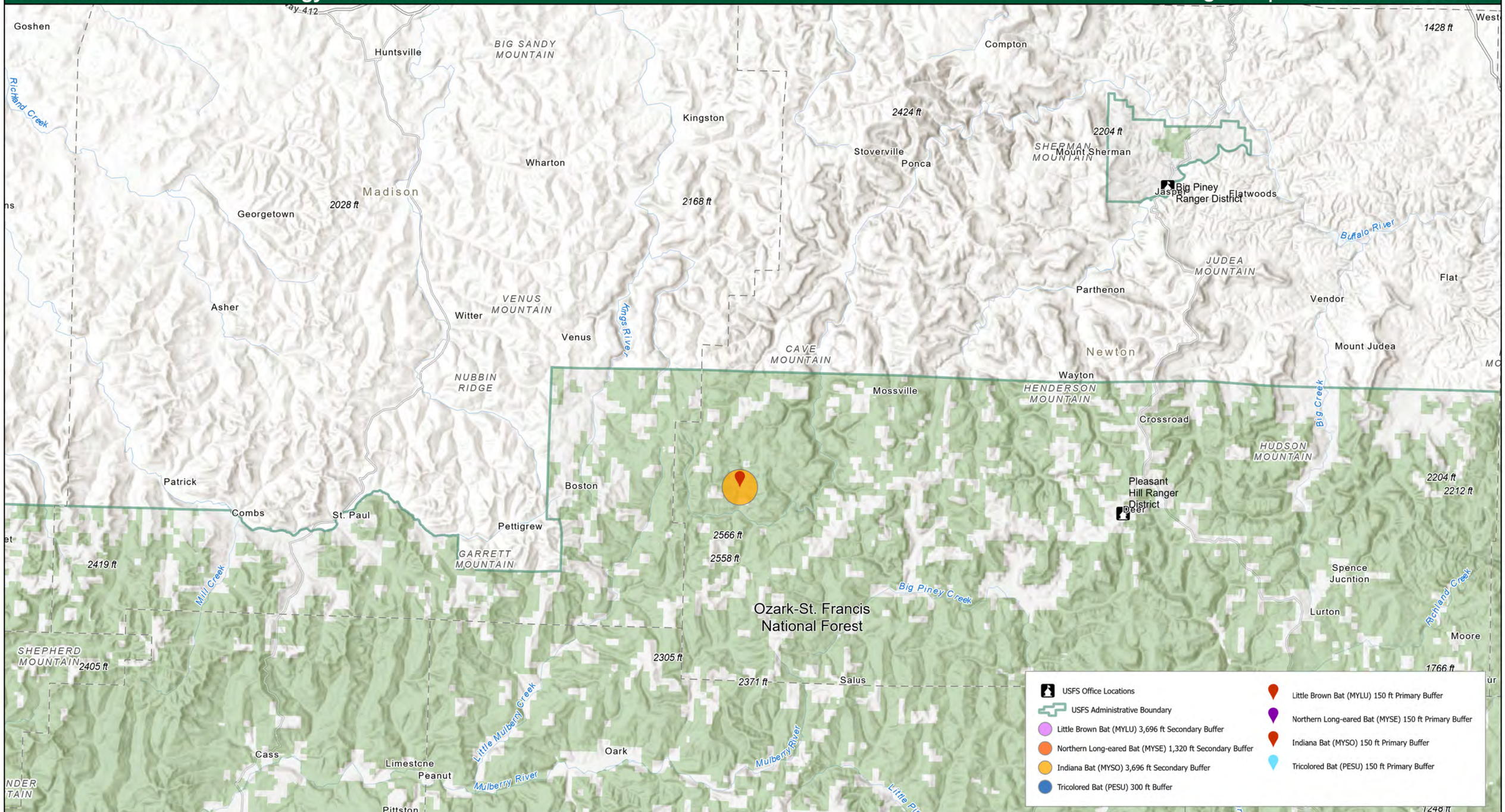

This product is reproduced from geospatial information prepared by the USDA Forest Service. Geospatial information and GIS product accuracy may vary. Using GIS products for purposes other than those for which they were created may yield inaccurate or misleading results. USDA Forest Service reserves the right to correct, update, modify or replace GIS products without notification

USDA is an equal opportunity provider, employer and lender

USFS Bat Conservation Strategy Roost Buffers

Region 8 | Ozark - St. Francis NF

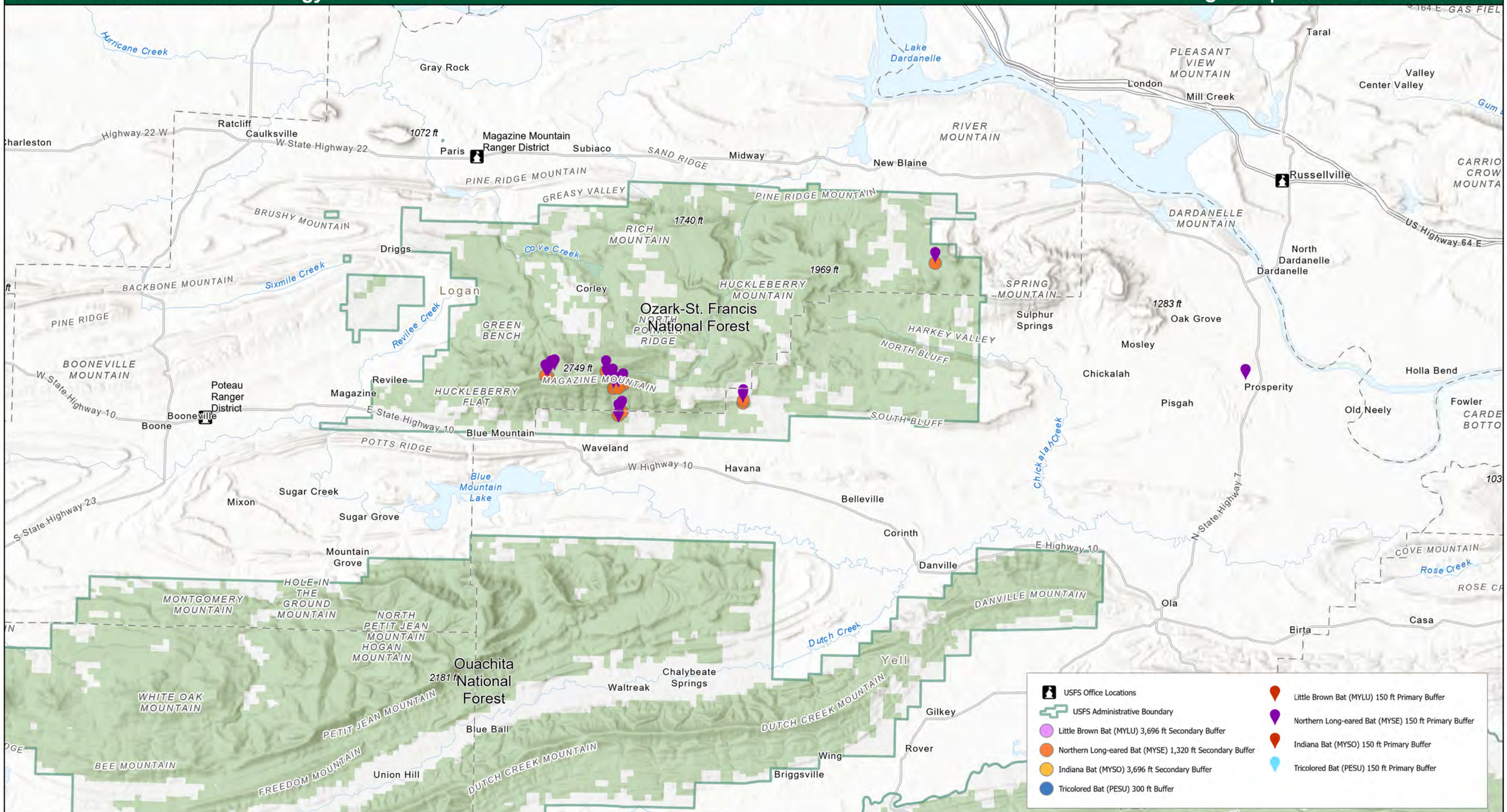

This product is reproduced from geospatial information prepared by the USDA Forest Service. Geospatial information and GIS product accuracy may vary. Using GIS products for purposes other than those for which they were created may yield inaccurate or misleading results. USDA Forest Service reserves the right to correct, update, modify or replace GIS products without notification

USDA is an equal opportunity provider, employer and lender

USFS Bat Conservation Strategy Roost Buffers

Region 8 | Ouachita NF

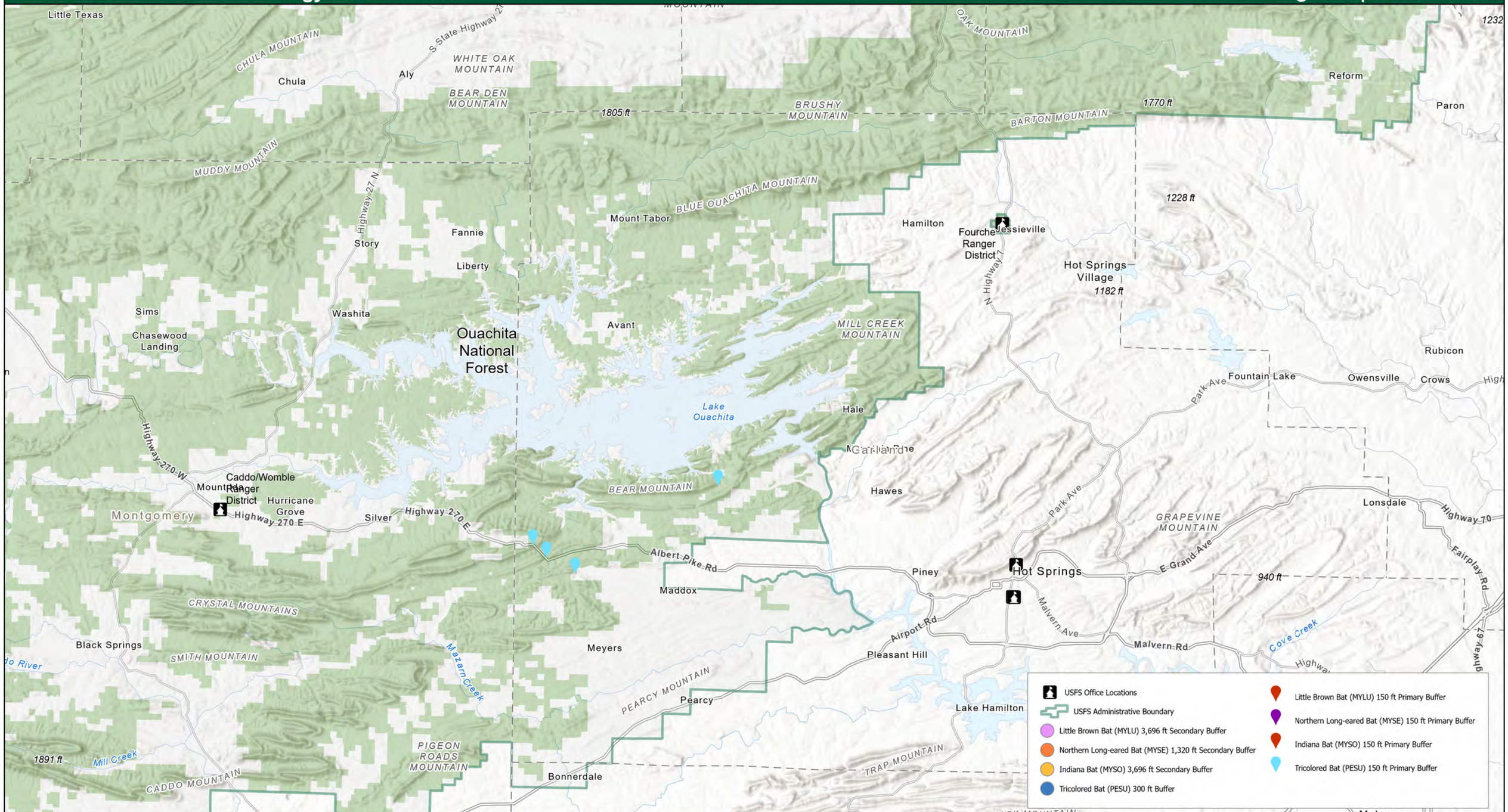

N

0 5 10 20 30 Miles

WGS 1984 Web Mercator Auxiliary Sphere

This product is reproduced from geospatial information prepared by the USDA Forest Service. Geospatial information and GIS product accuracy may vary. Using GIS products for purposes other than those for which they were created may yield inaccurate or misleading results. USDA Forest Service reserves the right to correct, update, modify or replace GIS products without notification

USDA is an equal opportunity provider, employer and lender

USFS Bat Conservation Strategy Roost Buffers

Region 8 | Ouachita NF

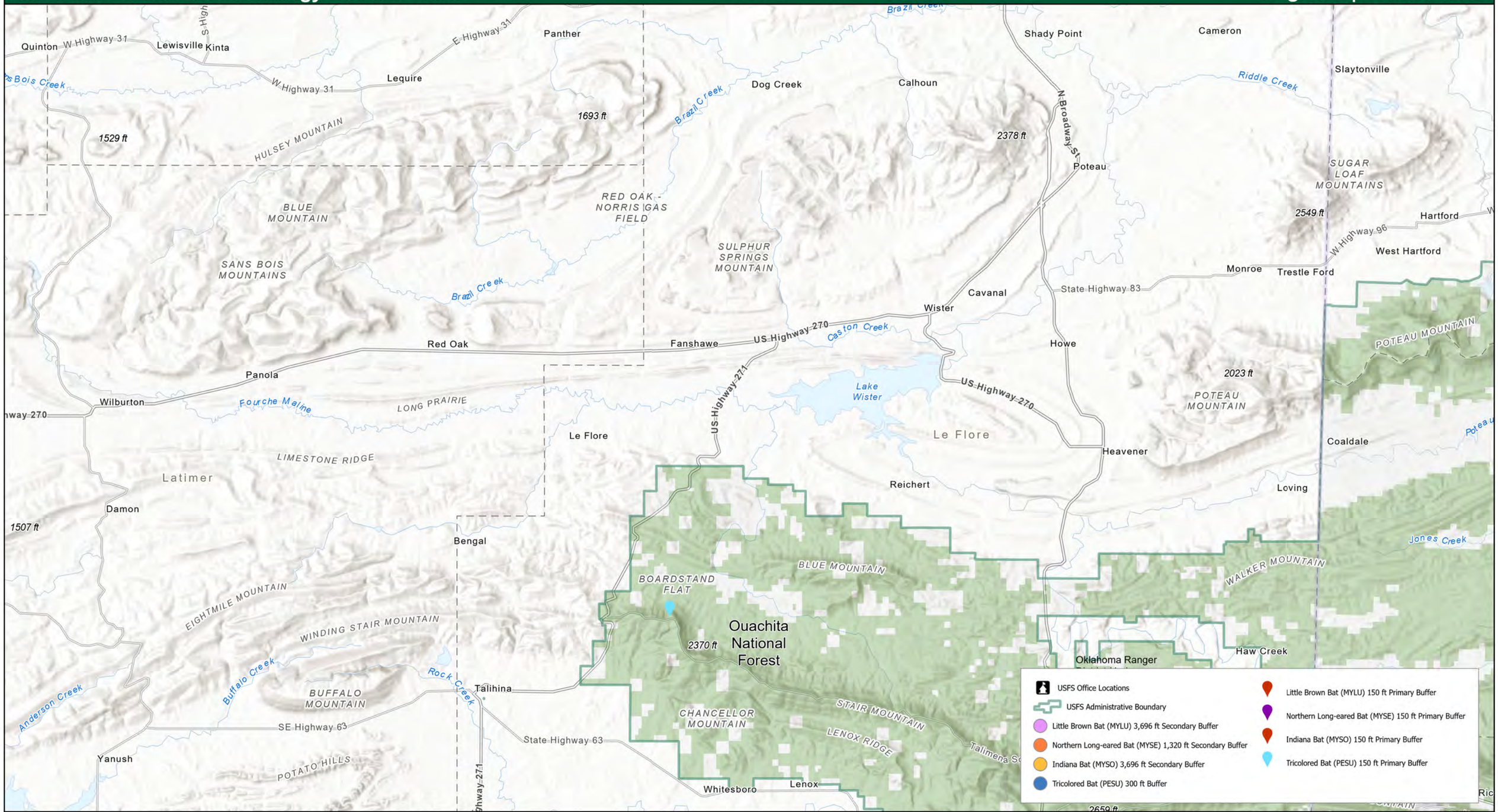

N

0 5 10 20 30 Miles

WGS 1984 Web Mercator Auxiliary Sphere

This product is reproduced from geospatial information prepared by the USDA Forest Service. Geospatial information and GIS product accuracy may vary. Using GIS products for purposes other than those for which they were created may yield inaccurate or misleading results. USDA Forest Service reserves the right to correct, update, modify or replace GIS products without notification

USDA is an equal opportunity provider, employer and lender

USFS Bat Conservation Strategy Roost Buffers

Region 8 | Ouachita NF

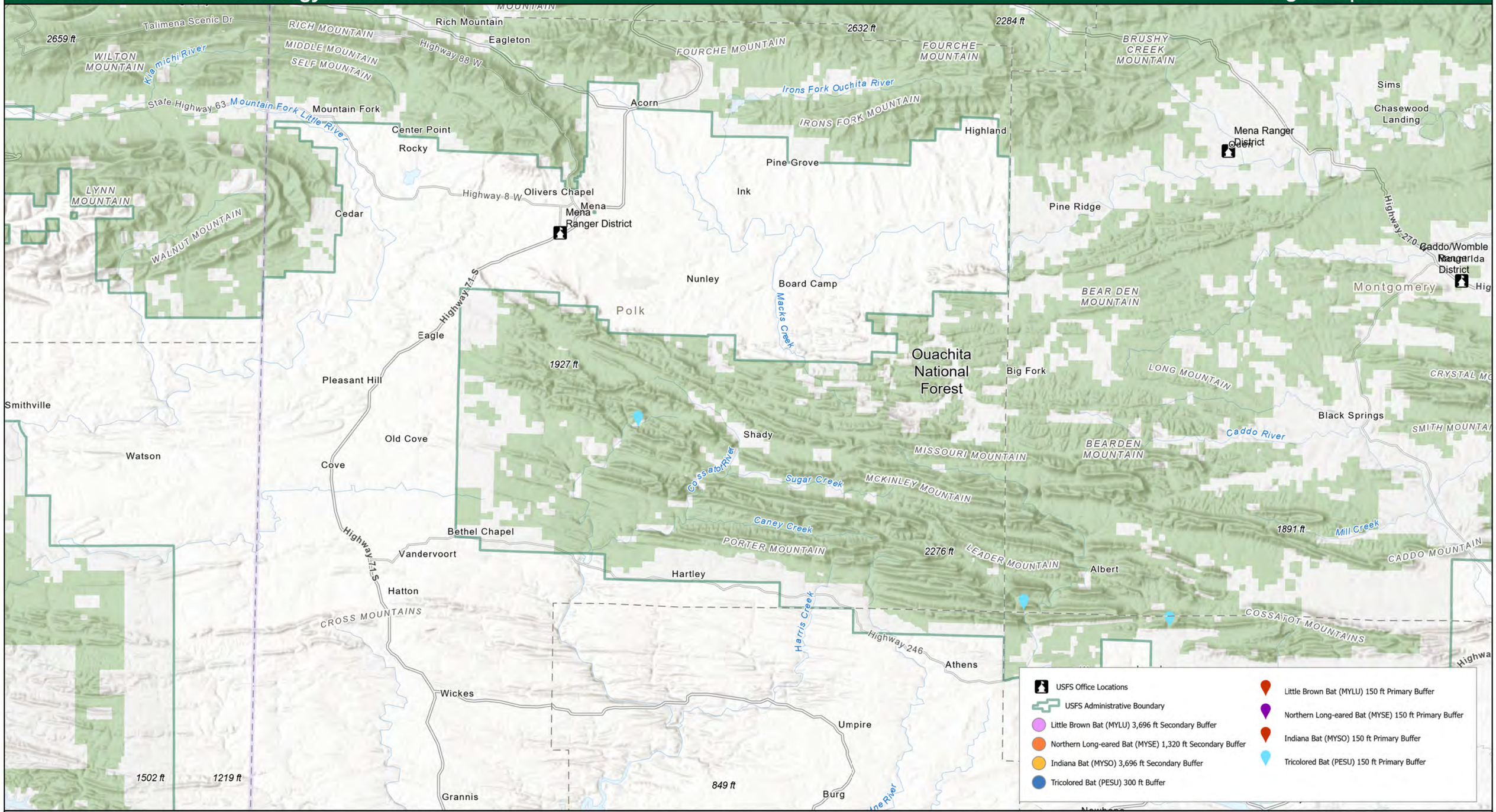

This product is reproduced from geospatial information prepared by the USDA Forest Service. Geospatial information and GIS product accuracy may vary. Using GIS products for purposes other than those for which they were created may yield inaccurate or misleading results. USDA Forest Service reserves the right to correct, update, modify or replace GIS products without notification

USDA is an equal opportunity provider, employer and lender

USFS Bat Conservation Strategy Roost Buffers

Region 8 | Ouachita NF

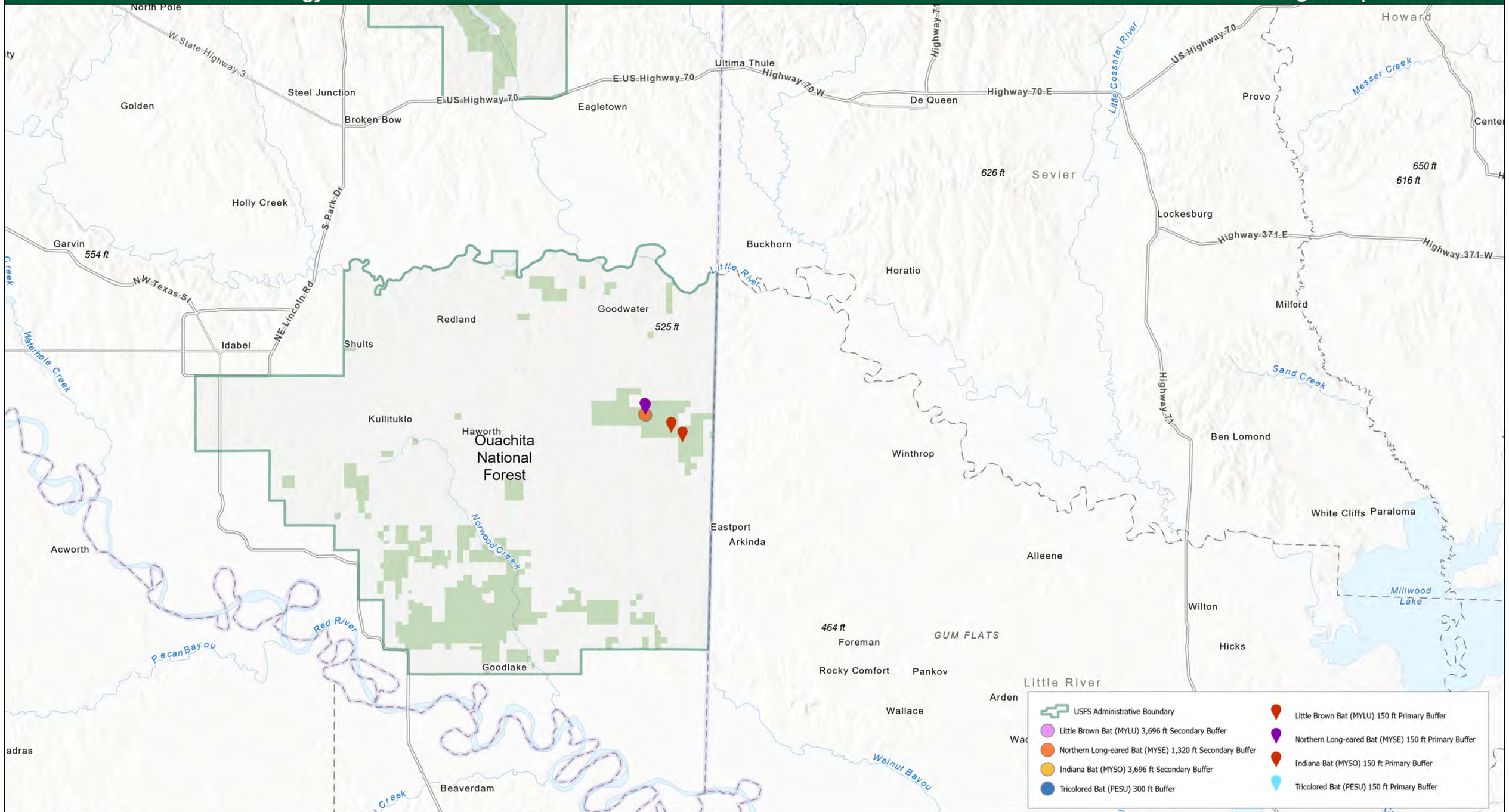

This product is reproduced from geospatial information prepared by the USDA Forest Service. Geospatial information and GIS product accuracy may vary. Using GIS products for purposes other than those for which they were created may yield inaccurate or misleading results. USDA Forest Service reserves the right to correct, update, modify or replace GIS products without notification

USDA is an equal opportunity provider, employer and lender

USFS Bat Conservation Strategy Roost Buffers

Region 8 | Cherokee NF

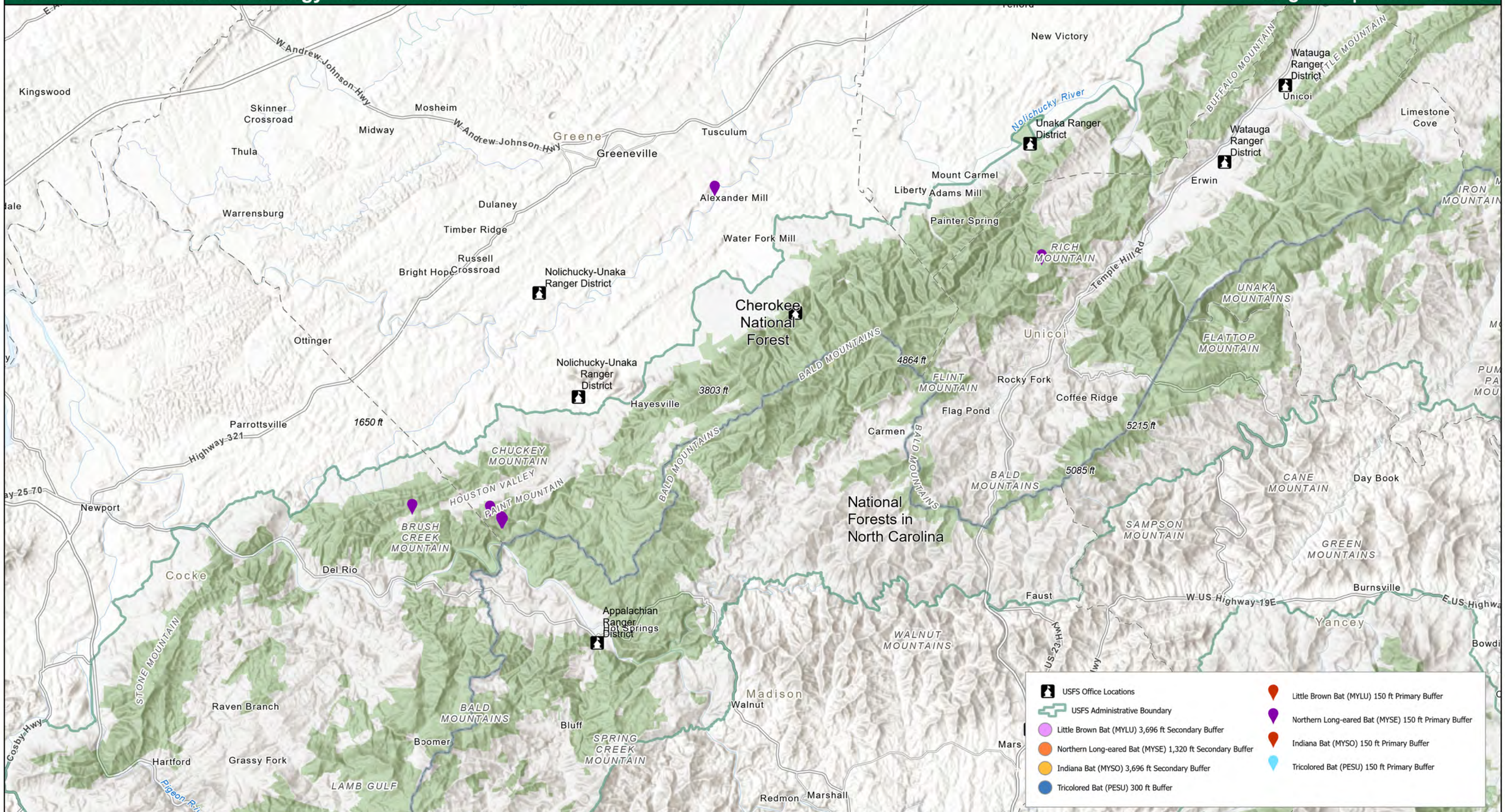

N

0 5 10 20 30 Miles

WGS 1984 Web Mercator Auxiliary Sphere

This product is reproduced from geospatial information prepared by the USDA Forest Service. Geospatial information and GIS product accuracy may vary. Using GIS products for purposes other than those for which they were created may yield inaccurate or misleading results. USDA Forest Service reserves the right to correct, update, modify or replace GIS products without notification

USDA is an equal opportunity provider, employer and lender

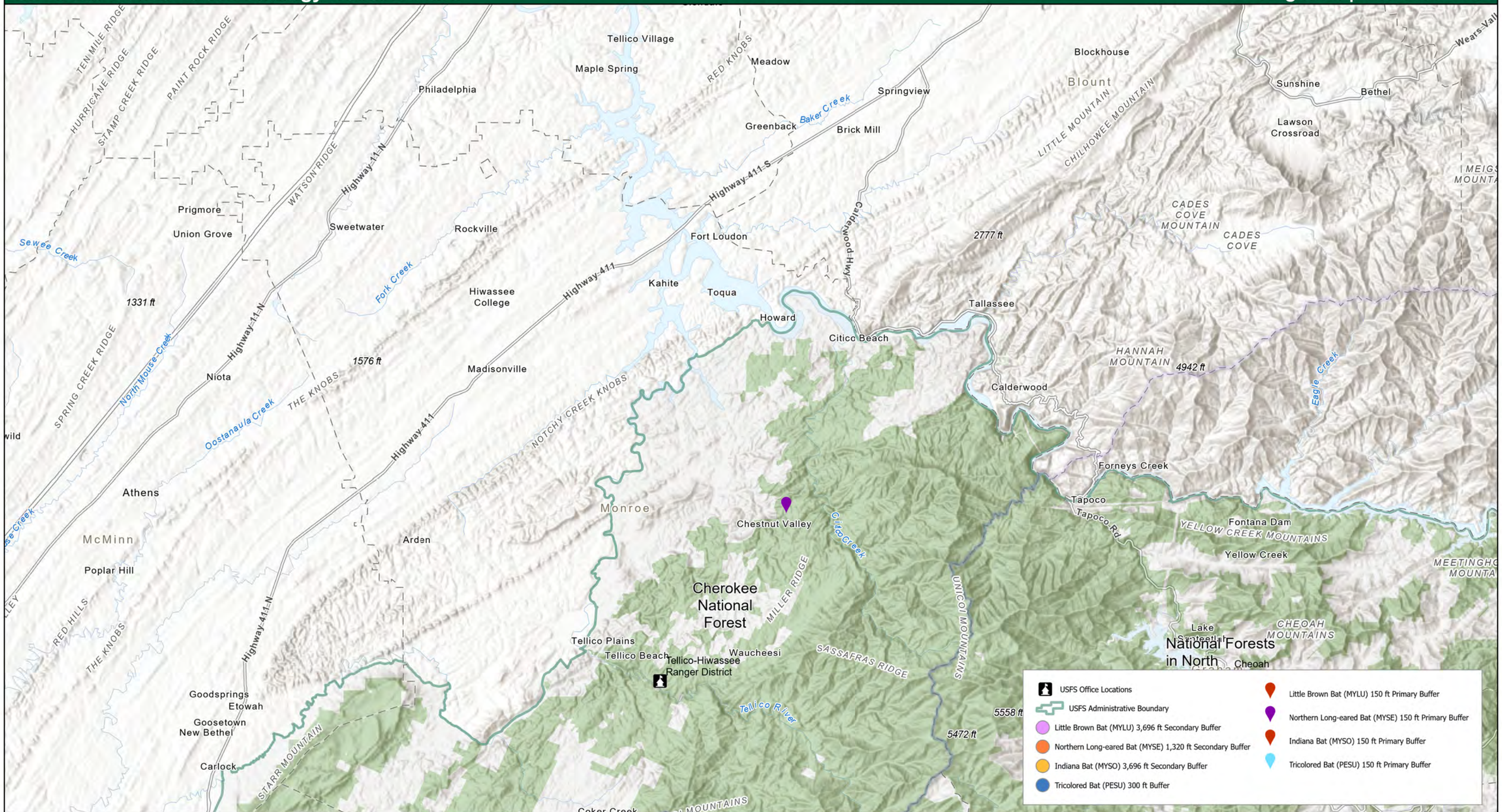

This product is reproduced from geospatial information prepared by the USDA Forest Service. Geospatial information and GIS product accuracy may vary. Using GIS products for purposes other than those for which they were created may yield inaccurate or misleading results. USDA Forest Service reserves the right to correct, update, modify or replace GIS products without notification

USDA is an equal opportunity provider, employer and lender

USFS Bat Conservation Strategy Roost Buffers

Region 8 | National Forests in North Carolina

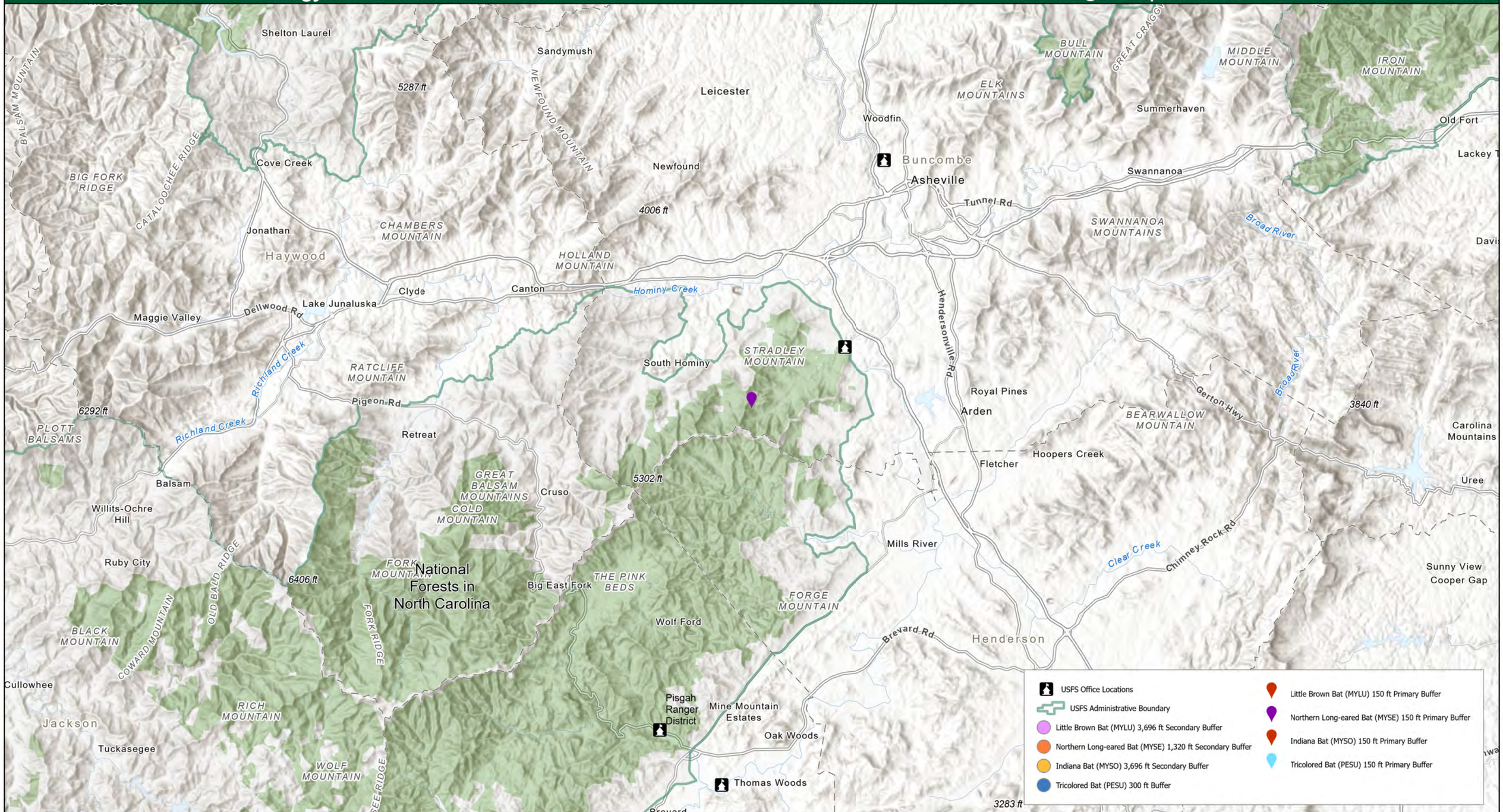

N

0 5 10 20 30 Miles

WGS 1984 Web Mercator Auxiliary Sphere

This product is reproduced from geospatial information prepared by the USDA Forest Service. Geospatial information and GIS product accuracy may vary. Using GIS products for purposes other than those for which they were created may yield inaccurate or misleading results. USDA Forest Service reserves the right to correct, update, modify or replace GIS products without notification

USDA is an equal opportunity provider, employer and lender

USFS Bat Conservation Strategy Roost Buffers

Region 8 | Chattahoochee - Oconee NF

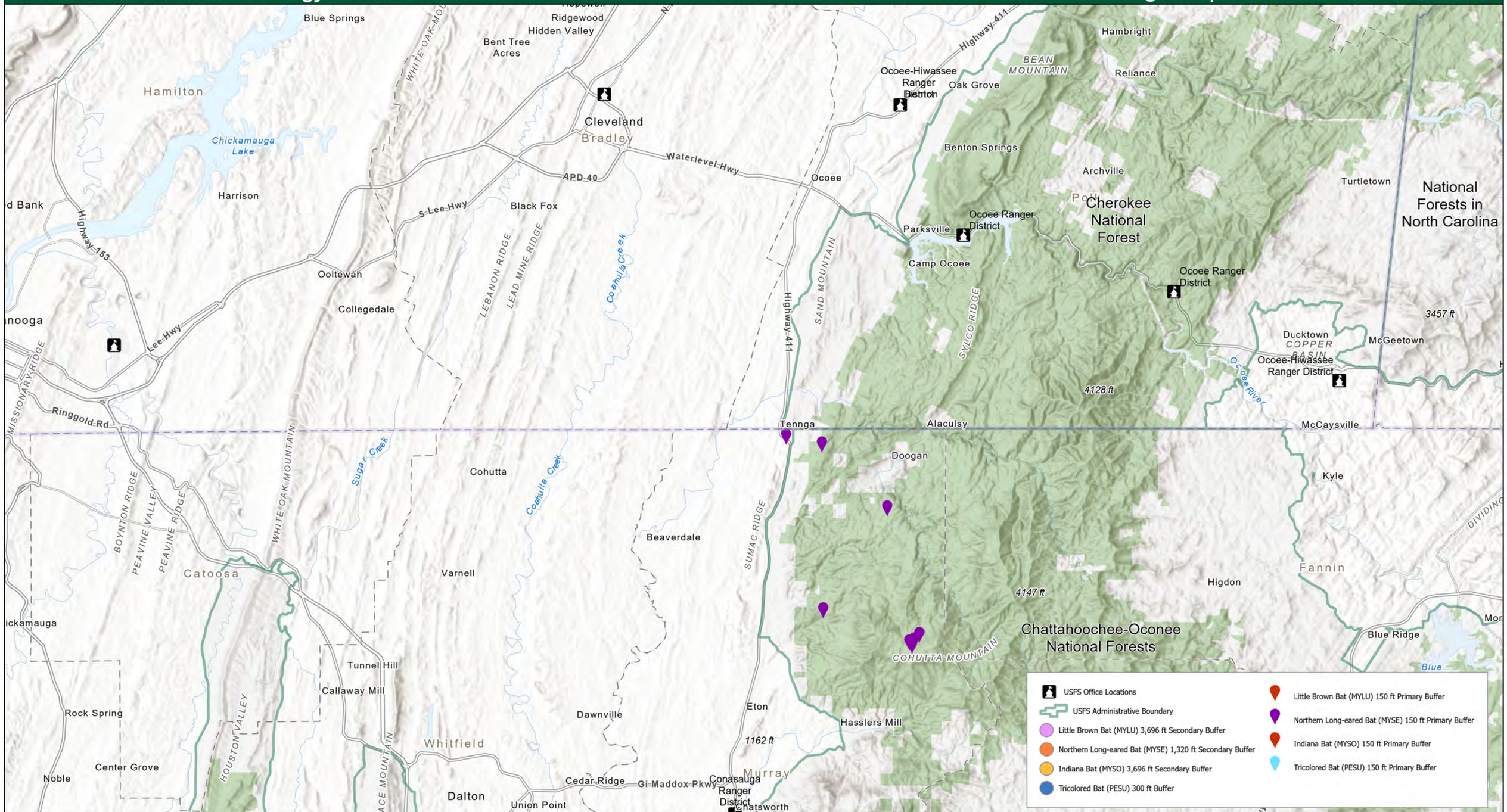

This product is reproduced from geospatial information prepared by the USDA Forest Service. Geospatial information and GIS product accuracy may vary. Using GIS products for purposes other than those for which they were created may yield inaccurate or misleading results. USDA Forest Service reserves the right to correct, update, modify or replace GIS products without notification

USDA is an equal opportunity provider, employer and lender

USFS Bat Conservation Strategy Roost Buffers

Region 8 | Chattahoochee - Oconee NF

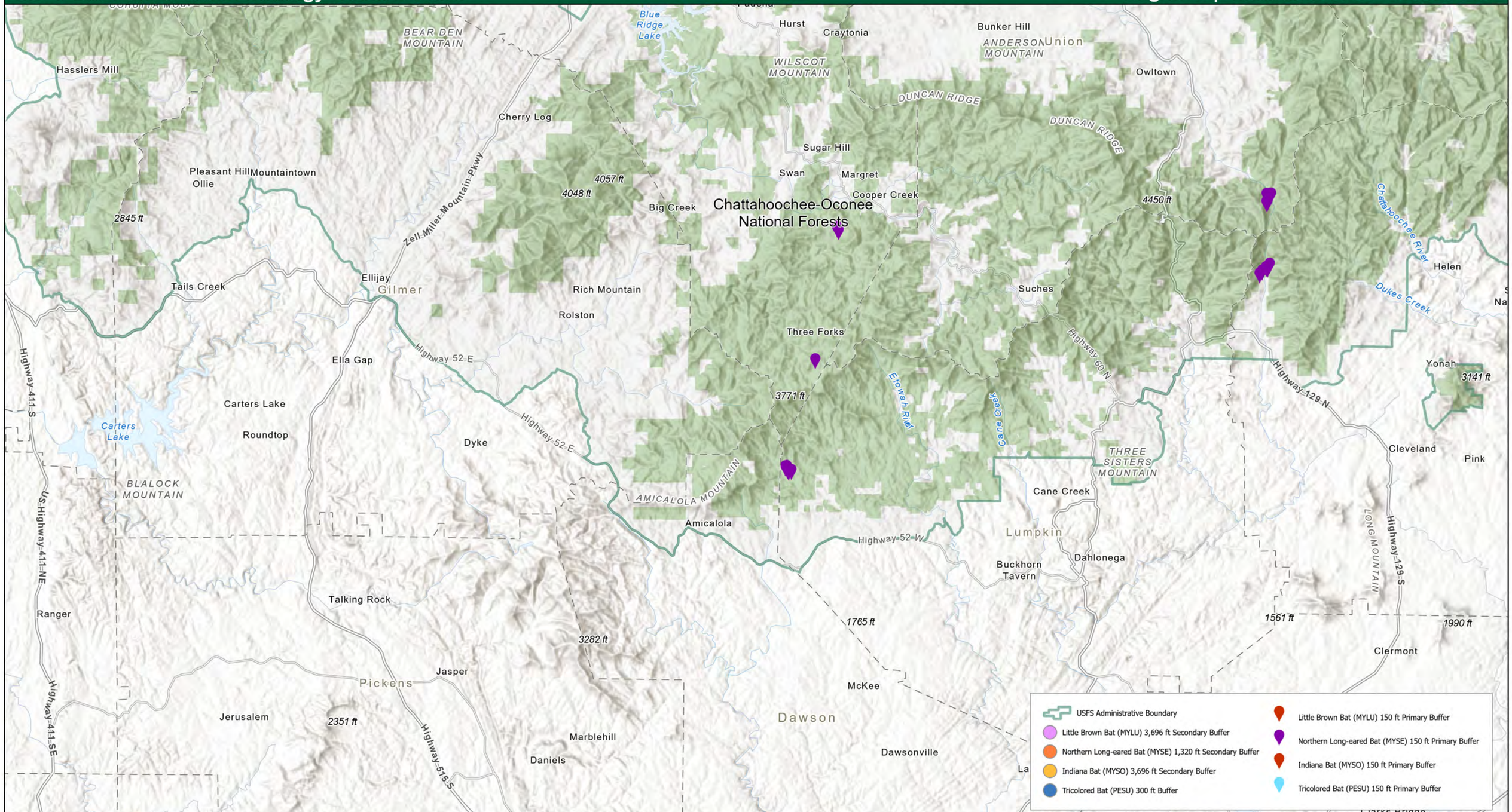

This product is reproduced from geospatial information prepared by the USDA Forest Service. Geospatial information and GIS product accuracy may vary. Using GIS products for purposes other than those for which they were created may yield inaccurate or misleading results. USDA Forest Service reserves the right to correct, update, modify or replace GIS products without notification

USDA is an equal opportunity provider, employer and lender

USFS Bat Conservation Strategy Roost Buffers

Region 8 | Chattahoochee - Oconee NF

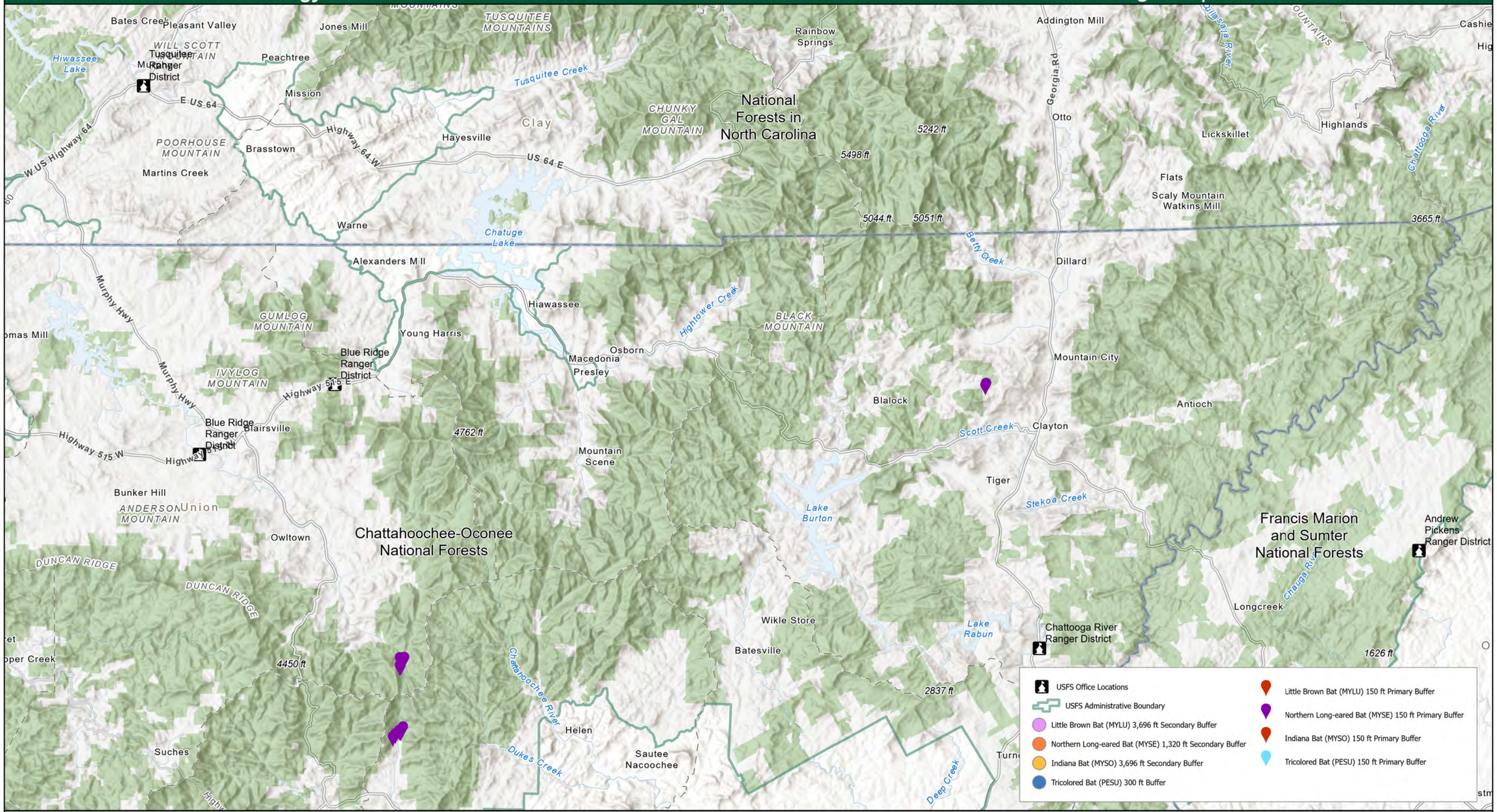

This product is reproduced from geospatial information prepared by the USDA Forest Service. Geospatial information and GIS product accuracy may vary. Using GIS products for purposes other than those for which they were created may yield inaccurate or misleading results. USDA Forest Service reserves the right to correct, update, modify or replace GIS products without notification

USDA is an equal opportunity provider, employer and lender

USFS Bat Conservation Strategy Roost Buffers

Region 8 | Kisatchie NF

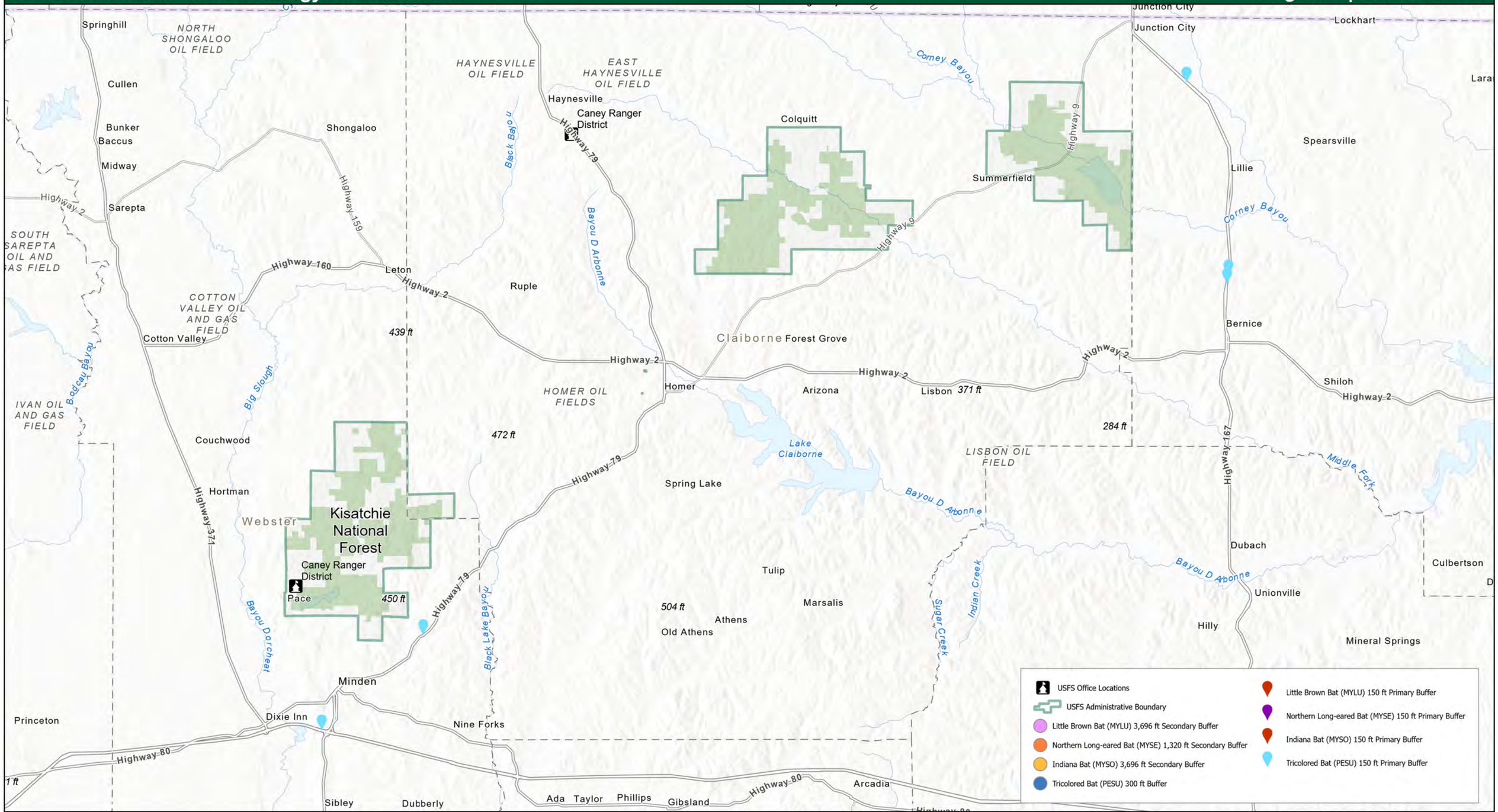

N

0 5 10 20 30 Miles

WGS 1984 Web Mercator Auxiliary Sphere

This product is reproduced from geospatial information prepared by the USDA Forest Service. Geospatial information and GIS product accuracy may vary. Using GIS products for purposes other than those for which they were created may yield inaccurate or misleading results. USDA Forest Service reserves the right to correct, update, modify or replace GIS products without notification

USDA is an equal opportunity provider, employer and lender

USFS Bat Conservation Strategy Roost Buffers

Region 8 | Kisatchie NF

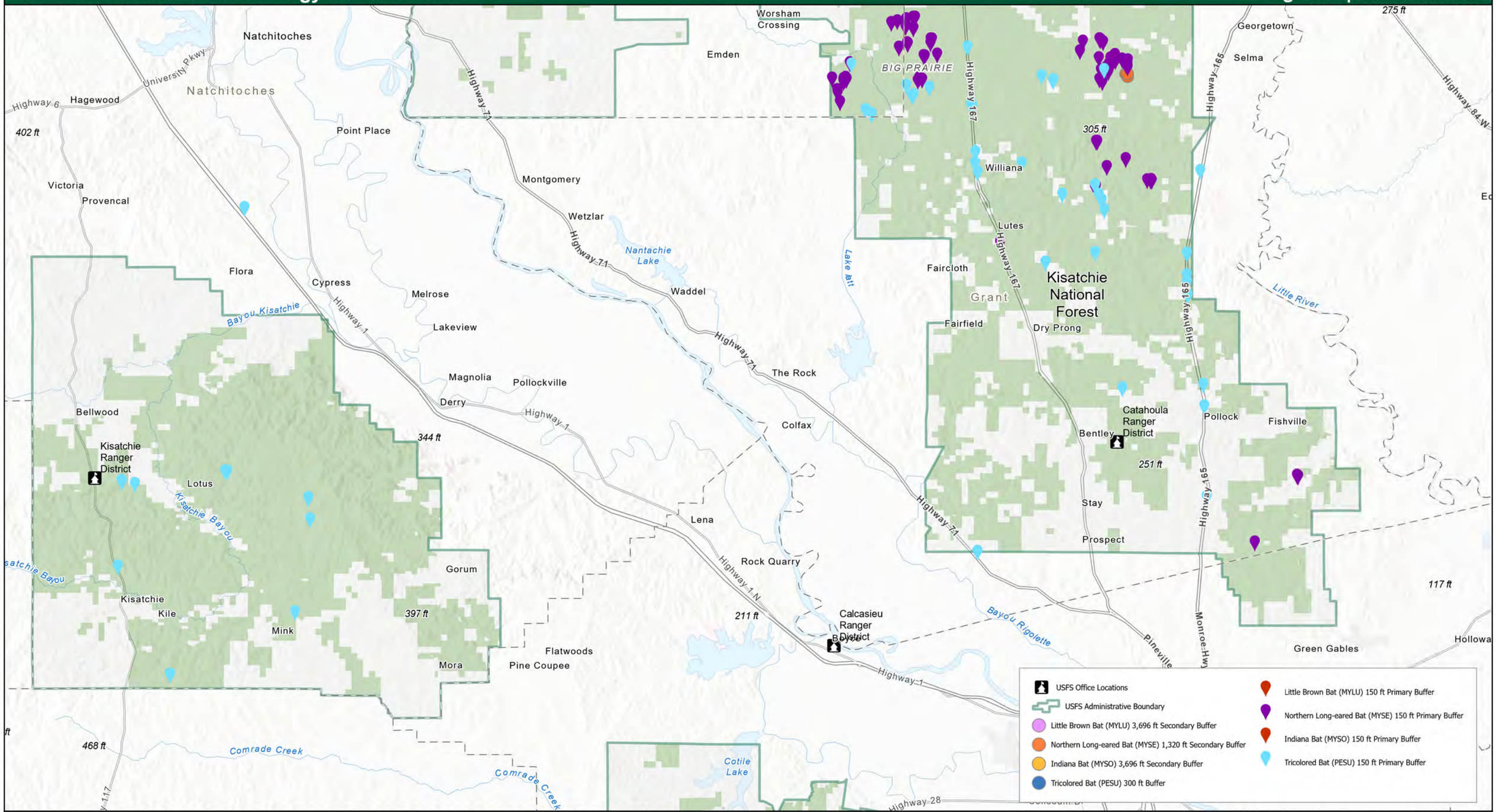

This product is reproduced from geospatial information prepared by the USDA Forest Service. Geospatial information and GIS product accuracy may vary. Using GIS products for purposes other than those for which they were created may yield inaccurate or misleading results. USDA Forest Service reserves the right to correct, update, modify or replace GIS products without notification

USDA is an equal opportunity provider, employer and lender

USFS Bat Conservation Strategy Roost Buffers

Region 8 | Kisatchie NF

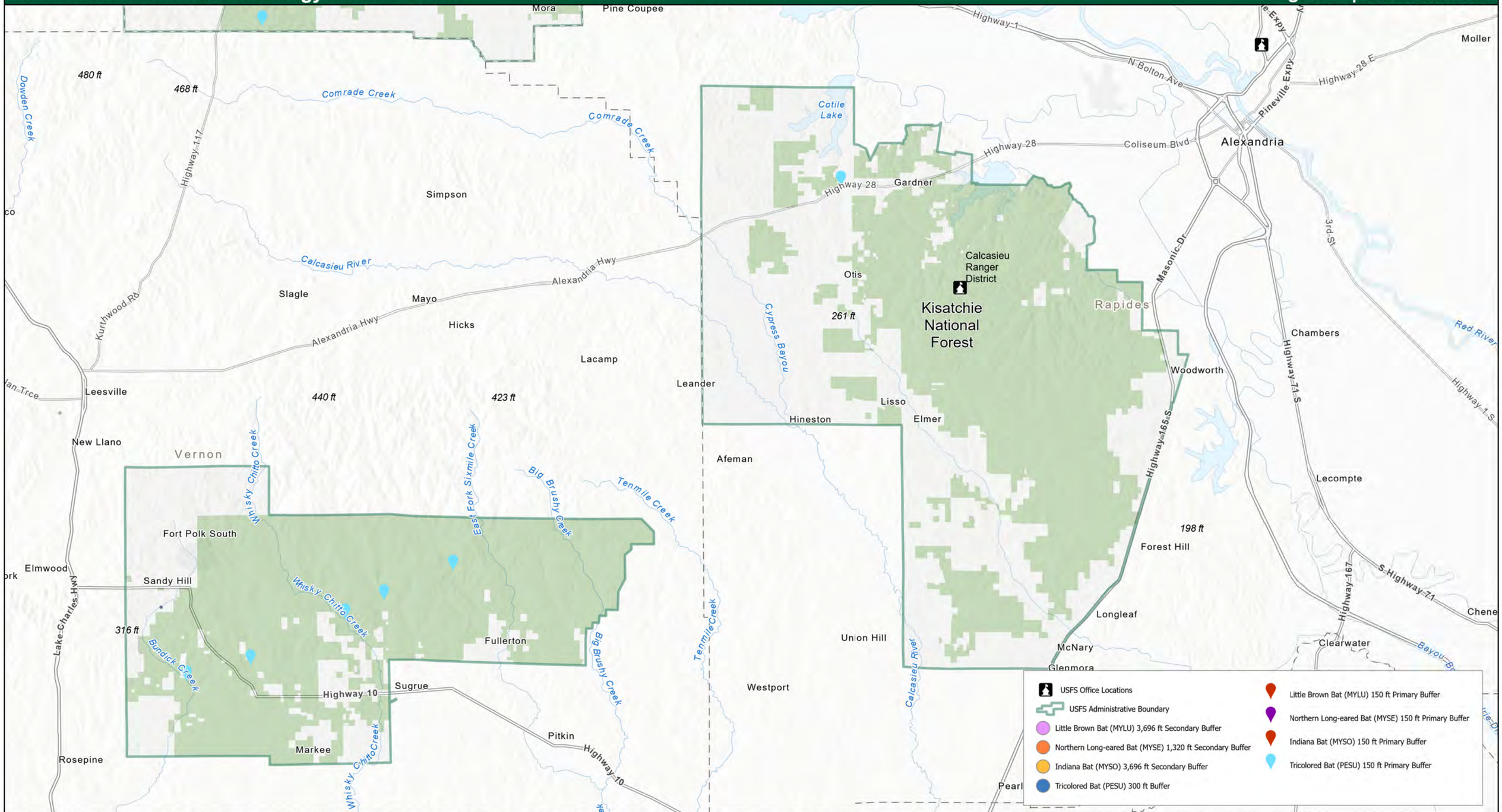

N

0 5 10 20 30 Miles

WGS 1984 Web Mercator Auxiliary Sphere

This product is reproduced from geospatial information prepared by the USDA Forest Service. Geospatial information and GIS product accuracy may vary. Using GIS products for purposes other than those for which they were created may yield inaccurate or misleading results. USDA Forest Service reserves the right to correct, update, modify or replace GIS products without notification

USDA is an equal opportunity provider, employer and lender

USFS Bat Conservation Strategy Roost Buffers

Region 8 | Kisatchie NF

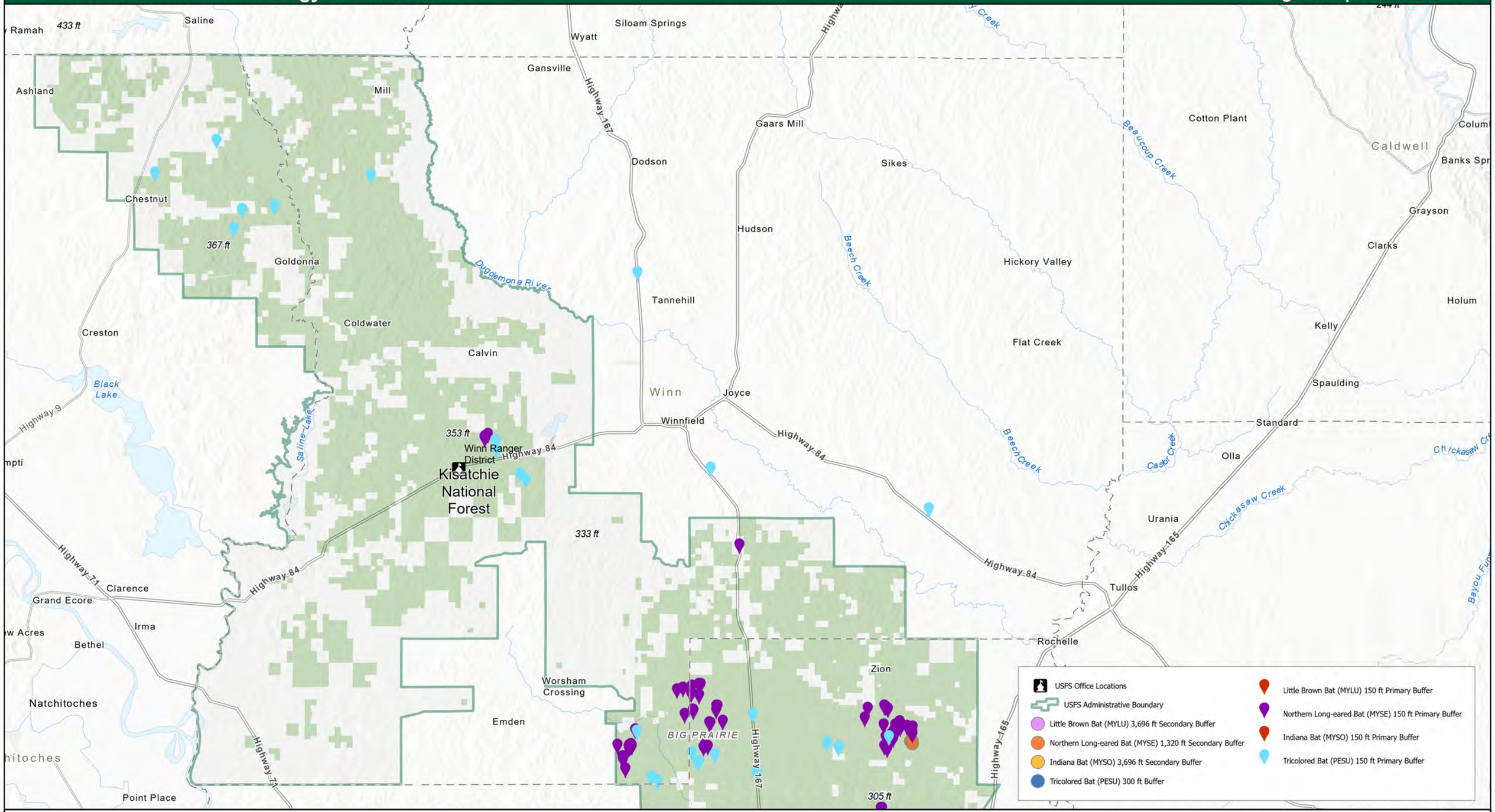

This product is reproduced from geospatial information prepared by the USDA Forest Service. Geospatial information and GIS product accuracy may vary. Using GIS products for purposes other than those for which they were created may yield inaccurate or misleading results. USDA Forest Service reserves the right to correct, update, modify or replace GIS products without notification

USDA is an equal opportunity provider, employer and lender

USFS Bat Conservation Strategy Roost Buffers

Region 8 | National Forests in Texas

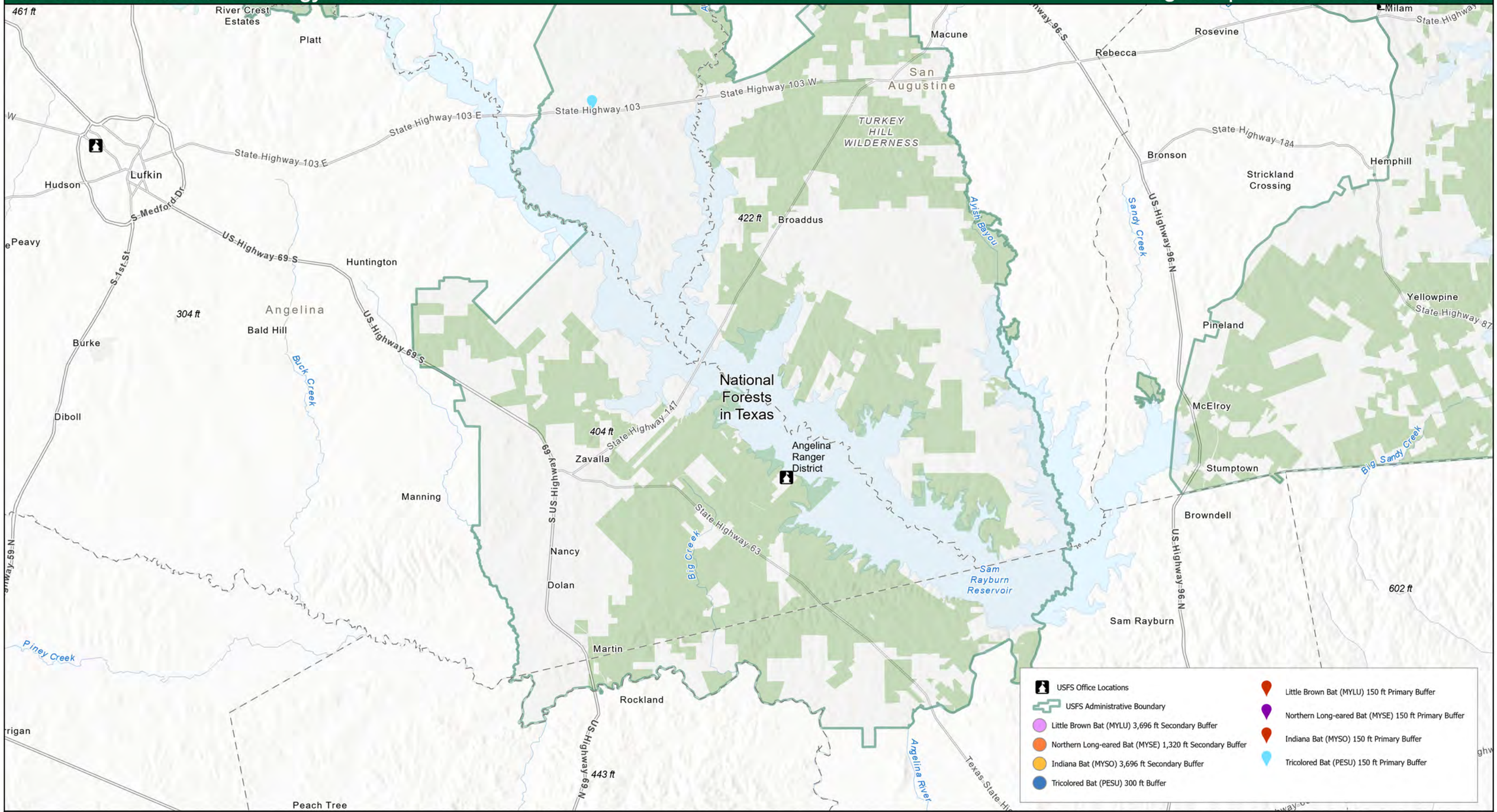

This product is reproduced from geospatial information prepared by the USDA Forest Service. Geospatial information and GIS product accuracy may vary. Using GIS products for purposes other than those for which they were created may yield inaccurate or misleading results. USDA Forest Service reserves the right to correct, update, modify or replace GIS products without notification

USDA is an equal opportunity provider, employer and lender

USFS Bat Conservation Strategy Roost Buffers

Region 8 | Francis Marion and Sumter NF

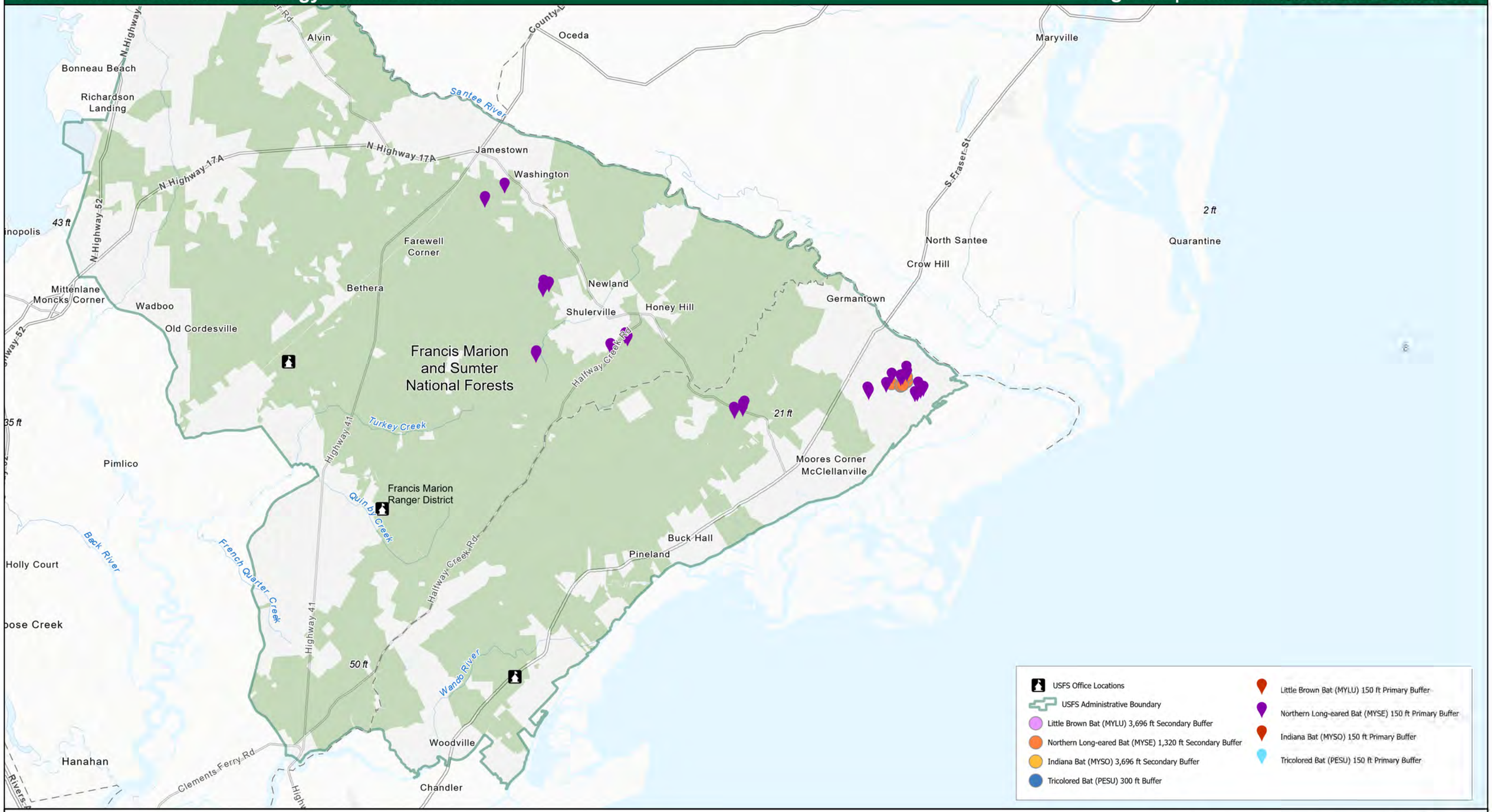

This product is reproduced from geospatial information prepared by the USDA Forest Service. Geospatial information and GIS product accuracy may vary. Using GIS products for purposes other than those for which they were created may yield inaccurate or misleading results. USDA Forest Service reserves the right to correct, update, modify or replace GIS products without notification

USDA is an equal opportunity provider, employer and lender